Use of SNAP to convert Planet Tanager hyperspectral imagery into GIS-ready formats

Emil A. Cherrington, Ph.D.
Lab for Applied Science / Earth System Science Center
University of Alabama in Huntsville

1 May 2026

Scenario: You are a GIS user and would like to open and view the Tanager data in *ArcGIS* or *QGIS.*

Objective: Use SNAP software to convert Tanager HDF5 data to GeoTIFF format (*which can be read by ArcGIS or QGIS*)

Methods

1. Select + download Tanager data from the open STAC
   - basic_sr_hdf5
2. [Install +] Open SNAP v.13
3. Open HDF file (File -> Open Product)
4. Reproject data (Raster -> Geometric -> Reproject)
5. Resample data (Raster -> Geometric -> Resample)
6. Export data (File -> Export -> GeoTIFF / BigTIFF)

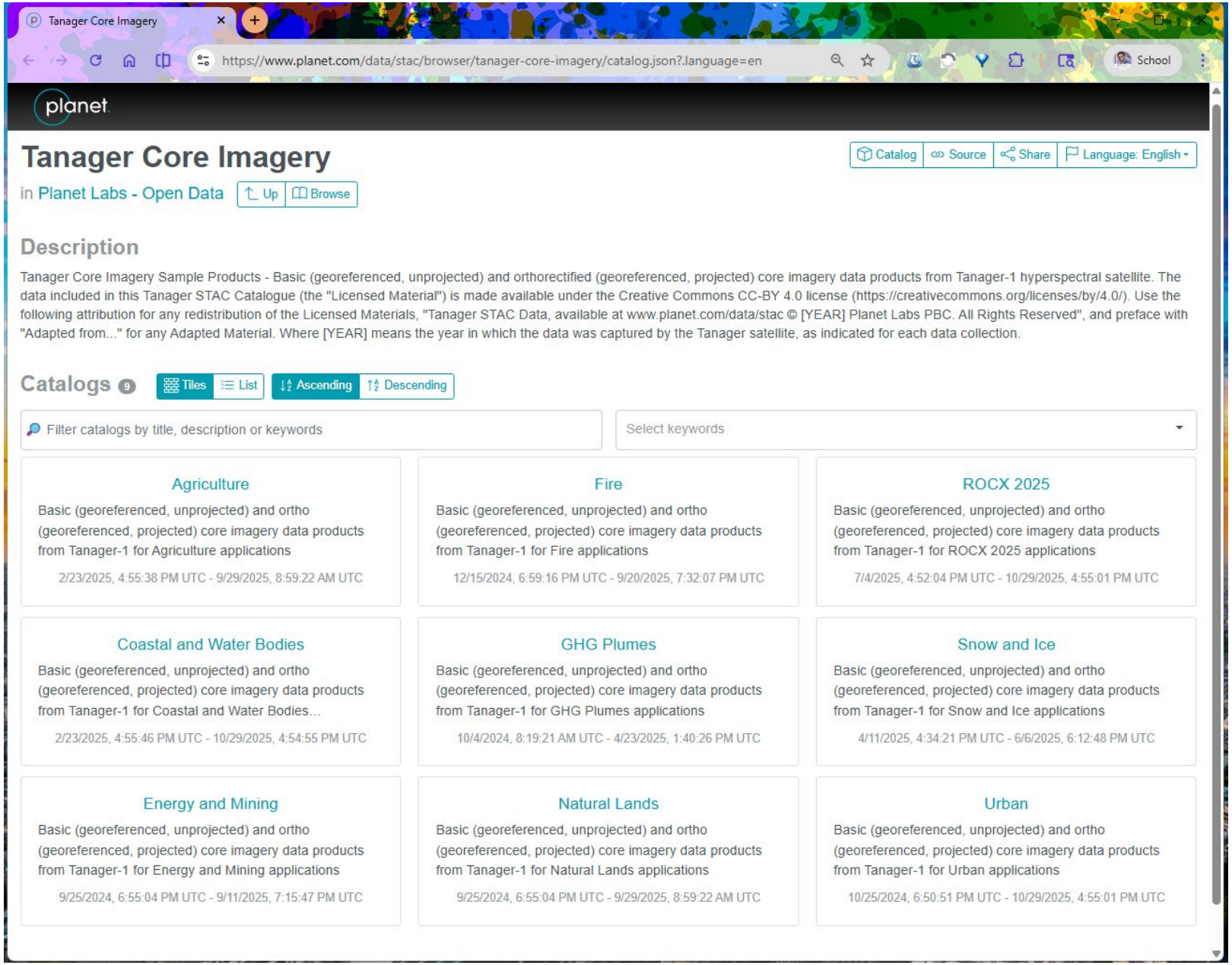

https://www.planet.com/data/stac/browser/tanager-core-imagery/catalog.json

Coastal and Water Bodies

https://www.planet.com/data/stac/browser/tanager-core-imagery/coastal-water-bodies/collection.json

planet

Coastal and Water Bodies

Catalog | Source | Share | Language: English

in Planet Labs - Open Data | Up | Browse

Description

Basic (georeferenced, unprojected) and ortho (georeferenced, projected) core imagery data products from Tanager-1 for Coastal and Water Bodies applications

tanager hyperspectral coastal/water bodies

License CC-BY-4.0

Temporal Extent 2/23/2025, 4:55:46 PM UTC - 10/29/2025, 4:54:55 PM UTC

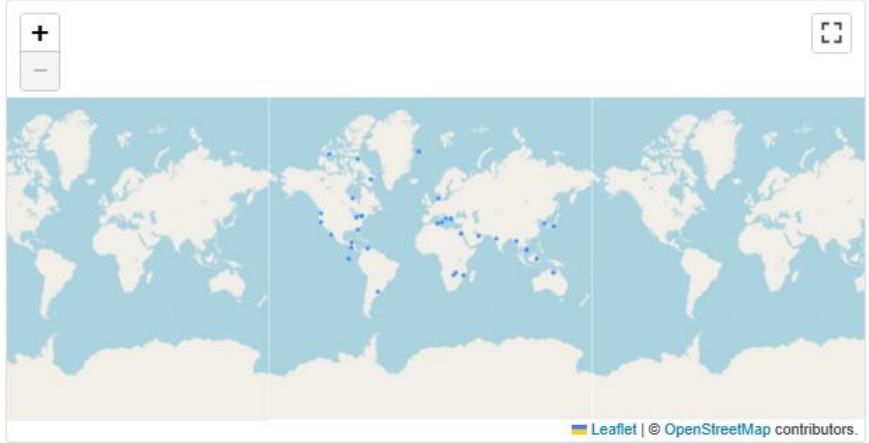

Asset

product_specifications GRAPHIC METADATA SPECIFICATIONS PDF

Providers

Planet Labs PBC PRODUCER PROCESSOR

Google Cloud Platform HOST

Items 43

Ascending | Descending

TanagerScene 20250223_165546_32_4001 Core Imagery

Hdf5 COG All data products from Tanager-1 for 20250223_165546_32_4001 near Usulután, 3401, El Salvador

2/23/2025, 4:55:46 PM UTC

TanagerScene 20250225_153627_16_4001 Core Imagery

Hdf5 COG All data products from Tanager-1 for 20250225_153627_16_4001 near Puerta Maraven, Parroquia Cardón, Municipio Carirubana, Falcon State, 4154, Venezuel...

2/25/2025, 3:36:27 PM UTC

TanagerScene 20250824_171857

https://www.planet.com/data/stac/browser/tanager-core-imagery/coastal-water-bodies/20250824_1...

planet

TanagerScene 20250824_171857_84_4001 Core Imagery

Catalog | Source | Share | Language: English

in Planet Labs - Open Data | Up | Collection | Browse

Map

Thumbnails

Assets

basic_beta_udm	METADATA CLOUD DATA-MASK COG
basic_radiance_hdf5	DATA METADATA CLOUD DATA-MASK HDF5
basic_sr_hdf5	REFLECTANCE DATA METADATA CLOUD DATA-MASK HDF5
geolocation_array	METADATA COG
ortho_beta_udm	METADATA CLOUD DATA-MASK COG
ortho_radiance_hdf5	DATA METADATA CLOUD DATA-MASK HDF5
ortho_sr_hdf5	REFLECTANCE DATA METADATA CLOUD DATA-MASK HDF5
ortho_visual	SHOWN VISUAL DATA COG
thumbnail	THUMBNAIL PNG

Description

All data products from Tanager-1 for 20250824_171857_84_4001 near Corozal Town, Corozal, Belize

Collection

Coastal and Water Bodies

Basic (georeferenced, unprojected) and ortho (georeferenced, projected) core imagery data products from Tanager-1 for Coastal and Water Bodies applications

2/23/2025, 4:55:46 PM UTC - 10/29/2025, 4:54:55 PM UTC

Metadata

General

Cloud Percent	6
Collection Mode	standard_sensitivity
Constellation	Tanager
Time of Data	8/24/2025, 5:18:57 PM UTC
GSD	32.86 m
Instruments	4001
License	CC-BY-4.0
Light Haze Percent	0
Location Description	Corozal Town, Corozal, Belize
Notes	*n/a*
Platform	Planet

Caveat: We focus on the basic_sr_hdf5 product because we were unable to successfully export the ortho_sr_hdf5 product w/ SNAP. That may change in the future.

TanagerScene 20250824_171857

https://www.planet.com/data/stac/browser/tanager-core-imagery/coastal-water-bodies/20250824_1...

planet

TanagerScene 20250824_171857_84_4001 Core Imagery

Catalog | Source | Share | Language: English

in Planet Labs - Open Data | Up | Collection | Browse

Map

Thumbnails

Assets

basic_beta_udm	METADATA CLOUD DATA-MASK COG
basic_radiance_hdf5	DATA METADATA CLOUD DATA-MASK HDF5
basic_sr_hdf5	REFLECTANCE DATA METADATA CLOUD DATA-MASK HDF5
geolocation_array	METADATA COG
ortho_beta_udm	METADATA CLOUD DATA-MASK COG
ortho_radiance_hdf5	DATA METADATA CLOUD DATA-MASK HDF5
ortho_sr_hdf5	REFLECTANCE DATA METADATA CLOUD DATA-MASK HDF5
ortho_visual	SHOWN VISUAL DATA COG
thumbnail	THUMBNAIL PNG

Description

All data products from Tanager-1 for 20250824_171857_84_4001 near Corozal Town, Corozal, Belize

Collection

Coastal and Water Bodies

Basic (georeferenced, unprojected) and ortho (georeferenced, projected) core imagery data products from Tanager-1 for Coastal and Water Bodies applications

2/23/2025, 4:55:46 PM UTC - 10/29/2025, 4:54:55 PM UTC

Metadata

General

Cloud Percent	6
Collection Mode	standard_sensitivity
Constellation	Tanager
Time of Data	8/24/2025, 5:18:57 PM UTC
GSD	32.86 m
Instruments	4001
License	CC-BY-4.0
Light Haze Percent	0
Location Description	Corozal Town, Corozal, Belize
Notes	*n/a*
Platform	Planet

TanagerScene 20250824_17185

https://www.planet.com/data/stac/browser/tanager-core-imagery/coastal-water-bodies/20250824_1...

planet

Assets

basic_beta_udm — METADATA CLOUD DATA-MASK COG

basic_radiance_hdf5 — DATA METADATA CLOUD DATA-MASK HDF5

basic_sr_hdf5 — REFLECTANCE DATA METADATA CLOUD DATA-MASK HDF5

Hdf5

Download | Copy URL

Surface reflectance and other associated datasets as a basic (geolocationed but not projected) HDFEOS formatted HDF5 file. Note that reflectance values are stored directly as floats in a 0-1 range and no scaling/offset is needed.

Metadata

Electro-Optical

Spectral Bands

Name	Wavelength	FWHM
aerosol_optical_depth	*n/a*	*n/a*
beta_cirrus_mask	*n/a*	*n/a*
beta_cloud_mask	*n/a*	*n/a*
column_water_vapour	*n/a*	*n/a*
nodata_pixels	*n/a*	*n/a*
sensor_azimuth	*n/a*	*n/a*
sensor_to_ground_path_length	*n/a*	*n/a*
sensor_zenith	*n/a*	*n/a*

Projection

Code	EPSG:4326
Image Dimensions	501 × 607

General

Cloud Percent	6
Collection Mode	standard_sensitivity
Constellation	Tanager
Time of Data	8/24/2025, 5:18:57 PM UTC
GSD	32.86 m
Instruments	4001
License	CC-BY-4.0
Light Haze Percent	0
Location Description	Corozal Town, Corozal, Belize
Notes	*n/a*
Platform	Planet
Plume Provider Ids	*n/a*
Quality Category	standard

View Geometry

Viewing Azimuth	315.8 °
Off-Nadir Angle	1.3 °
Sun Azimuth	129.1 °
Sun Elevation	78.3 °

TanagerScene 20250824_171857

https://www.planet.com/data/stac/browser/tanager-core-imagery/coastal-water-bodies/20250824_1...

planet

Assets

- basic_beta_udm — METADATA CLOUD DATA-MASK COG
- basic_radiance_hdf5 — DATA METADATA CLOUD DATA-MASK HDF5
- basic_sr_hdf5 — REFLECTANCE DATA METADATA CLOUD DATA-MASK HDF5

Hdf5

Download | Copy URL

Surface reflectance and other associated datasets as a basic (geolocationed but not projected) HDFEOS formatted HDF5 file. Note that reflectance values are stored directly as floats in a 0-1 range and no scaling/offset is needed.

Metadata

Electro-Optical

Spectral Bands

Name	Wavelength	FWHM
sun_zenith	*n/a*	*n/a*
surface_reflectance_B000	0.37644 µm	0.00539 µm
surface_reflectance_B001	0.38141 µm	0.00542 µm
surface_reflectance_B002	0.38638 µm	0.00545 µm
surface_reflectance_B003	0.39135 µm	0.00548 µm
surface_reflectance_B004	0.39632 µm	0.00552 µm
surface_reflectance_B005	0.40129 µm	0.00555 µm
surface_reflectance_B006	0.40626 µm	0.00558 µm

Projection

Code	EPSG:4326
Image Dimensions	501 × 607

General

Cloud Percent	6
Collection Mode	standard_sensitivity
Constellation	Tanager
Time of Data	8/24/2025, 5:18:57 PM UTC
GSD	32.86 m
Instruments	4001
License	CC-BY-4.0
Light Haze Percent	0
Location Description	Corozal Town, Corozal, Belize
Notes	*n/a*
Platform	Planet
Plume Provider Ids	*n/a*
Quality Category	standard

View Geometry

Viewing Azimuth	315.8 °
Off-Nadir Angle	1.3 °
Sun Azimuth	129.1 °
Sun Elevation	78.3 °

TanagerScene 20250824_171185

https://www.planet.com/data/stac/browser/tanager-core-imagery/coastal-water-bodies/20250...

School

planet

ortho_radiance_hdf5 DATA METADATA CLOUD DATA-MASK HDF5

ortho_sr_hdf5 REFLECTANCE DATA METADATA CLOUD DATA-MASK HDF5

Hdf5

Download | Copy URL

Surface reflectance and other associated datasets as an orthorectified (georeferenced and projected) HDFEOS formatted HDF5 file. Note that nearest neighbor resampling is used in orthorectification and reflectance values are stored directly as floats in a 0-1 range so no scaling/offset is needed.

Metadata

Electro-Optical

Spectral Bands

Name	Wavelength	FWHM
surface_reflectance_B000	0.37644 µm	0.00539 µm
surface_reflectance_B001	0.38141 µm	0.00542 µm
surface_reflectance_B002	0.38638 µm	0.00545 µm
surface_reflectance_B003	0.39135 µm	0.00548 µm
surface_reflectance_B004	0.39632 µm	0.00552 µm
surface_reflectance_B005	0.40129 µm	0.00555 µm
surface_reflectance_B006	0.40626 µm	0.00558 µm
surface_reflectance_B007	0.41123 µm	0.0056 µm

Projection

Code	EPSG:7030
Image Dimensions	671 × 763

Raster Imagery

Bands

License	CC-BY-4.0
Light Haze Percent	0
Location Description	Corozal Town, Corozal, Belize
Notes	*n/a*
Platform	Planet
Plume Provider Ids	*n/a*
Quality Category	standard

View Geometry

Viewing Azimuth	315.8 °
Off-Nadir Angle	1.3 °
Sun Azimuth	129.1 °
Sun Elevation	78.3 °

1. Download ESA's SNAP (v.13)

→ Science Toolbox Exploitation Platform

DOWNLOAD

SNAP Download

Here you can download the latest installers for SNAP and the various Toolboxes.

Data provision is available to all users via the Copernicus Data Space Ecosystem.

Current Version

The current version is **13.0.0** (31.10.2025 **08:00 UTC**).

For detailed information about changes made for this release please have a look at the release notes of the different projects: SNAP, Optical Toolbox, Microwave Toolbox, SMOS Box

Note: the PROBA-V Toolbox is not compatible with SNAP version 13.

We offer three different installers for your convenience. Choose the one from the following table which suits your needs. During the installation process, each toolbox can be excluded from the installation. Toolboxes which are not initially installed via the installer can be later downloaded and installed using the plugin manager. Please note that SNAP and the individual Sentinel Toolboxes also support numerous sensors other than Sentinel.
If you previously used SNAP before, we recommend uninstalling the older SNAP version before installing the latest version.

Note: users running SNAP on Linux/Ubuntu version >= 16.04, please read the following instructions to avoid conflicts with the Ubuntu package manager "snap": Update of SNAP default installation directory

	Windows 64-Bit	Mac OS ARM	Mac OS Intel	Linux 64-bit
Sentinel Toolboxes	These installers contain the **Microwave** and **Optical** Toolboxes, download size is close to 1GB.			
	Main Download Mirror Download	Main Download Mirror Download	Main Download Mirror Download	Main Download Mirror Download

2. Install, then open SNAP

https://step.esa.int/main/download/snap-download/

Convert basic_sr_hdf5 to GeoTIFF

File Edit View Analysis Layer Vector Raster Optical Radar Tools Window Help

SNAP 13

Search (Ctrl+I)

Product Explorer | Pixel Info

Navigation | Colour Manipulation | Uncertainty Vis

1 : 22.28

0°

Product Library | Layer Manager | Mask Manager

SNAP 13 - Open Product

Recent Items

Desktop

Documents

This PC

Network

Look In: planet_tanager

- bz
- sv
- us_ca
- us_fl
- us_ut
- x_scrap
- 20250824_171857_84_4001_ortho_sr_hdf5.h5

Advanced

File Name: 20250824_171857_84_4001_ortho_sr_hdf5.h5

Files of Type: All Files

Open | Cancel

X -- Y -- | Lat -- Lon -- | Zoom -- Level -- | Pixel Spacing: -- m -- m

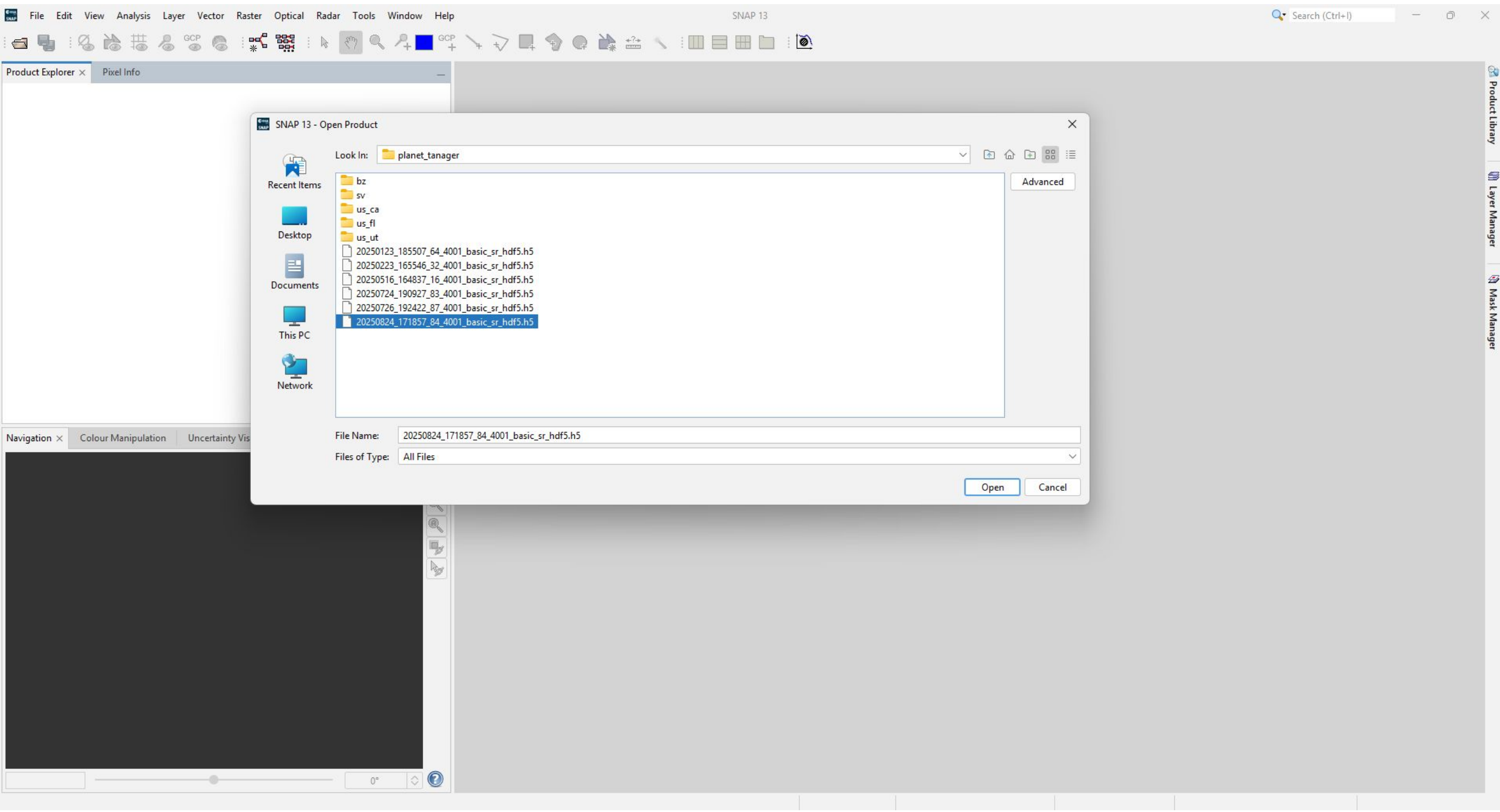
File Edit View Analysis Layer Vector Raster Optical Radar Tools Window Help
SNAP 13
Search (Ctrl+I)
Product Explorer
Pixel Info
Navigation
Colour Manipulation
Uncertainty Vis
Product Library
Layer Manager
Mask Manager
SNAP 13 - Open Product
Look In:
planet_tanager
Recent Items
Desktop
Documents
This PC
Network
bz
sv
us_ca
us_fl
us_ut
20250123_185507_64_4001_basic_sr_hdf5.h5
20250223_165546_32_4001_basic_sr_hdf5.h5
20250516_164837_16_4001_basic_sr_hdf5.h5
20250724_190927_83_4001_basic_sr_hdf5.h5
20250726_192422_87_4001_basic_sr_hdf5.h5
20250824_171857_84_4001_basic_sr_hdf5.h5
Advanced
File Name:
20250824_171857_84_4001_basic_sr_hdf5.h5
Files of Type:
All Files
Open
Cancel

File Edit View Analysis Layer Vector Raster Optical Radar Tools Window Help

[1] 20250824_171857_84_4001_basic_sr_hdf5 - [D:\gis\compil_imagery\hyperspectral\planet_tanager\20250824_171857_84_4001_basic_sr_hdf5.h5] - SNAP 13

Search (Ctrl+I)

Product Explorer | Pixel Info

- [1] 20250824_171857_84_4001_basic_sr_hdf5
  - Metadata
  - Vector Data
  - Bands

Navigation | Colour Manipulation | Uncertainty Visualisation | World View

0°

Product Library

Layer Manager

Mask Manager

File Edit View Analysis Layer Vector Raster Optical Radar Tools Window Help

[1] 20250824_171857_84_4001_basic_sr_hdf5 - [D:\gis\compil_imagery\hyperspectral\planet_tanager\20250824_171857_84_4001_basic_sr_hdf5.h5] - SNAP 13

Search (Ctrl+I)

Product Explorer | Pixel Info

- [1] 20250824_171857_84_4001_basic_sr_hdf5
  - Metadata
  - Vector Data
  - Bands
    - Longitude
    - Latitude
    - aerosol_optical_depth
    - beta_cirrus_mask
    - beta_cloud_mask
    - column_water_vapour
    - nodata_pixels
    - sensor_azimuth
    - sensor_to_ground_path_length
    - sensor_zenith
    - sun_azimuth
    - sun_zenith
    - surface_reflectance_Band1
    - surface_reflectance_Band2
    - surface_reflectance_Band3
    - surface_reflectance_Band4
    - surface_reflectance_Band5
    - surface_reflectance_Band6
    - surface_reflectance_Band7
    - surface_reflectance_Band8

Navigation | Colour Manipulation | Uncertainty Visualisation | World View

0°

Product Library

Layer Manager

Mask Manager

File Edit View Analysis Layer Vector Raster Optical Radar Tools Window Help

[1] 20250824_171857_84_4001_basic_sr_hdf5 - [D:\gis\compil_imagery\hyperspectral\planet_tanager\20250824_171857_84_4001_basic_sr_hdf5.h5] - SNAP 13

Product Explorer | Pixel Info

- [1] 20250824_171857_84_4001_basic_sr_hdf5
  - Metadata
  - Vector Data
  - Bands
    - Longitude
    - Latitude
    - aerosol_optical_depth
    - beta_cirrus_mask
    - beta_cloud_mask
    - column_water_vapour
    - nodata_pixels
    - sensor_azimuth
    - sensor_to_ground_path_length
    - sensor_zenith
    - sun_azimuth
    - sun_zenith
    - surface_reflectance_Band1
    - surface_reflectance_Band2
    - surface_reflectance_Band3
    - surface_reflectance_Band4
    - surface_reflectance_Band5
    - surface_reflectance_Band6
    - surface_reflectance_Band7
    - surface_reflectance_Band8

Navigation | Colour Manipulation | Uncertainty Visualisation | World View

Metadata

Electro-Optical

Spectral Bands

Name	Wavelength	FWHM
sun_zenith	*n/a*	*n/a*
surface_reflectance_B000	0.37644 µm	0.00539 µm
surface_reflectance_B001	0.38141 µm	0.00542 µm
surface_reflectance_B002	0.38638 µm	0.00545 µm
surface_reflectance_B003	0.39135 µm	0.00548 µm
surface_reflectance_B004	0.39632 µm	0.00552 µm
surface_reflectance_B005	0.40129 µm	0.00555 µm
surface_reflectance_B006	0.40626 µm	0.00558 µm

Spectral Bands

Name	Wavelength	FWHM
surface_reflectance_B419	2.46926 µm	0.00523 µm
surface_reflectance_B420	2.47422 µm	0.00522 µm
surface_reflectance_B421	2.47918 µm	0.00522 µm
surface_reflectance_B422	2.48413 µm	0.00521 µm
surface_reflectance_B423	2.48909 µm	0.00521 µm
surface_reflectance_B424	2.49404 µm	0.0052 µm
surface_reflectance_B425	2.499 µm	0.0052 µm
surface_reflectance_uncertainty_B000	*n/a*	*n/a*

Product Library | Layer Manager | Mask Manager

File Edit View Analysis Layer Vector Raster Optical Radar Tools Window Help [1] surface_reflectance_Band1 - 20250824_171857_84_4001_basic_sr_hdf5 - D:\gis\compil_imagery\hyperspectral\planet_tanager\20250824_171857_84_4001_basic_sr_hdf5.h5 - SNAP 13

Product Explorer | Pixel Info

- [1] 20250824_171857_84_4001_basic_sr_hdf5
  - Metadata
  - Vector Data
  - Bands
    - Longitude
    - Latitude
    - aerosol_optical_depth
    - beta_cirrus_mask
    - beta_cloud_mask
    - column_water_vapour
    - nodata_pixels
    - sensor_azimuth
    - sensor_to_ground_path_length
    - sensor_zenith
    - sun_azimuth
    - sun_zenith
    - surface_reflectance_Band1
    - surface_reflectance_Band2
    - surface_reflectance_Band3
    - surface_reflectance_Band4
    - surface_reflectance_Band5
    - surface_reflectance_Band6
    - surface_reflectance_Band7
    - surface_reflectance_Band8

Navigation - [1] sur... | Colour Manipulation - ... | Uncertainty Visualisation | World View

1.8 : 1 0°

[1] surface_reflectance_Band1

Product Library | Layer Manager | Mask Manager

X -- Y -- Lat -- Lon -- Zoom -- Level -- Pixel Spacing: -- m -- m

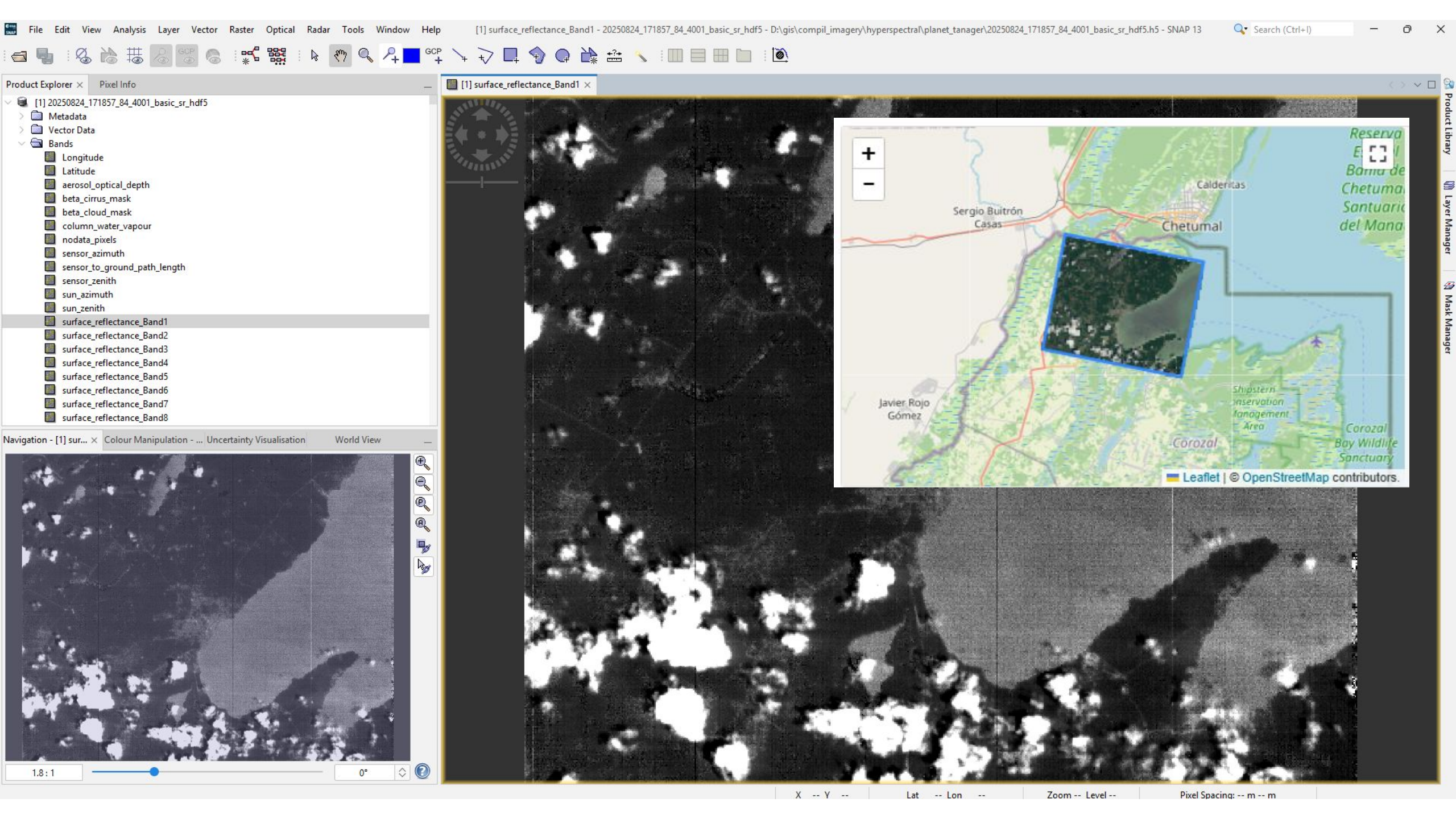
File Edit View Analysis Layer Vector Raster Optical Radar Tools Window Help
[1] surface_reflectance_Band1 - 20250824_171857_84_4001_basic_sr_hdf5 - D:\gis\compil_imagery\hyperspectral\planet_tanager\20250824_171857_84_4001_basic_sr_hdf5.h5 - SNAP 13
Product Explorer
Pixel Info
[1] 20250824_171857_84_4001_basic_sr_hdf5
Metadata
Vector Data
Bands
Longitude
Latitude
aerosol_optical_depth
beta_cirrus_mask
beta_cloud_mask
column_water_vapour
nodata_pixels
sensor_azimuth
sensor_to_ground_path_length
sensor_zenith
sun_azimuth
sun_zenith
surface_reflectance_Band1
surface_reflectance_Band2
surface_reflectance_Band3
surface_reflectance_Band4
surface_reflectance_Band5
surface_reflectance_Band6
surface_reflectance_Band7
surface_reflectance_Band8
Navigation - [1] sur...
Colour Manipulation - ...
Uncertainty Visualisation
World View
1.8 : 1
0°
[1] surface_reflectance_Band1
Caldericas
Sergio Buitrón Casas
Chetumal
Javier Rojo Gómez
Corozal
Leaflet | © OpenStreetMap contributors.
Product Library
Layer Manager
Mask Manager
X -- Y --
Lat -- Lon --
Zoom -- Level --
Pixel Spacing: -- m -- m

File Edit View Analysis Layer Vector Raster Optical Radar Tools Window Help

[1] surface_reflectance_Band1 - 20250824_171857_84_4001_basic_sr_hdf5 - D:\gis\compil_imagery\hyperspectral\planet_tanager\20250824_171857_84_4001_basic_sr_hdf5.h5 - SNAP 13

Search (Ctrl+I)

Product Explorer | Pixel Info

[1] 20250824_171857_84_4001_basic_sr_hdf5
- Metadata
- Vector Data
- Bands
  - Longitude
  - Latitude
  - aerosol_optical_depth
  - beta_cirrus_mask
  - beta_cloud_mask
  - column_water_vapour
  - nodata_pixels
  - sensor_azimuth
  - sensor_to_ground_path_length
  - sensor_zenith
  - sun_azimuth
  - sun_zenith
  - surface_reflectance_Band1
  - surface_reflectance_Band2
  - surface_reflectance_Band3
  - surface_reflectance_Band4
  - surface_reflectance_Band5
  - surface_reflectance_Band6
  - surface_reflectance_Band7
  - surface_reflectance_Band8

Raster:
- Band Maths...
- Filtered Band...
- Convert Band
- Propagate Uncertainty...
- Geo-Coding Displacement Bands...
- Subset...
- DEM Tools
- Geometric
  - Reprojection
  - Resampling
  - Mosaicking
  - Multi-size Mosaic
  - Level-3 Binning
  - Collocation
  - GeFolki Co-registration
- Masks
- Data Conversion
- Image Analysis
- Classification
- Segmentation
- Change Detection
- Export
- ECOSTRESS Swath to Grid
- Band Select
- Raster to Vector

Navigation - [1] sur... | Colour Manipulation - ... | Uncertainty Visualisation | World View

1.8 : 1 | 0°

[1] surface_reflectance_Band1

Product Library | Layer Manager | Mask Manager

X -- Y -- | Lat -- Lon -- | Zoom -- Level -- | Pixel Spacing: -- m -- m

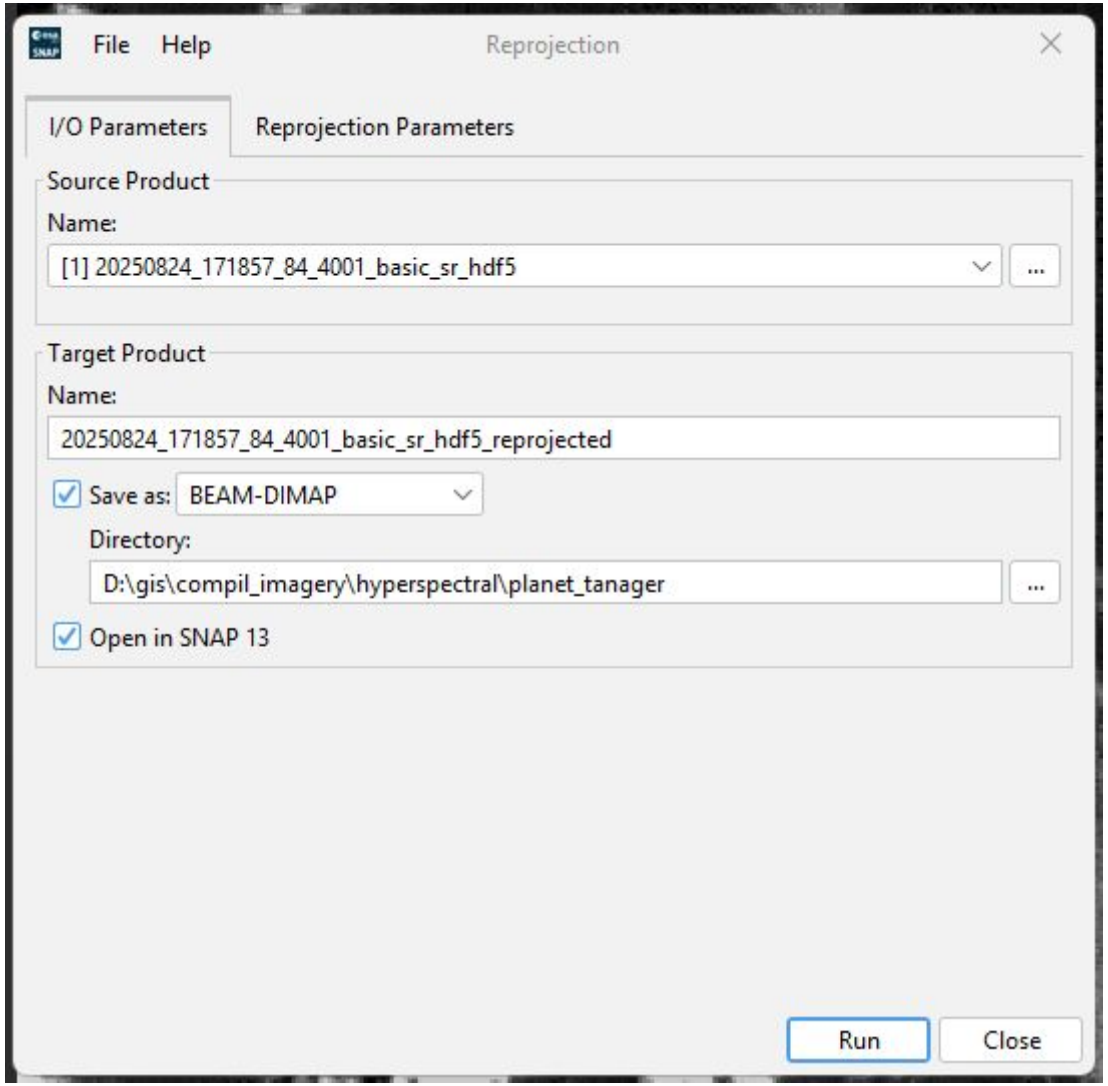
File
Help
Reprojection
I/O Parameters
Reprojection Parameters
Source Product
Name:
[1] 20250824_171857_84_4001_basic_sr_hdf5
...
Target Product
Name:
20250824_171857_84_4001_basic_sr_hdf5_reprojected
Save as:
BEAM-DIMAP
Directory:
D:\gis\compil_imagery\hyperspectral\planet_tanager
...
Open in SNAP 13
Run
Close

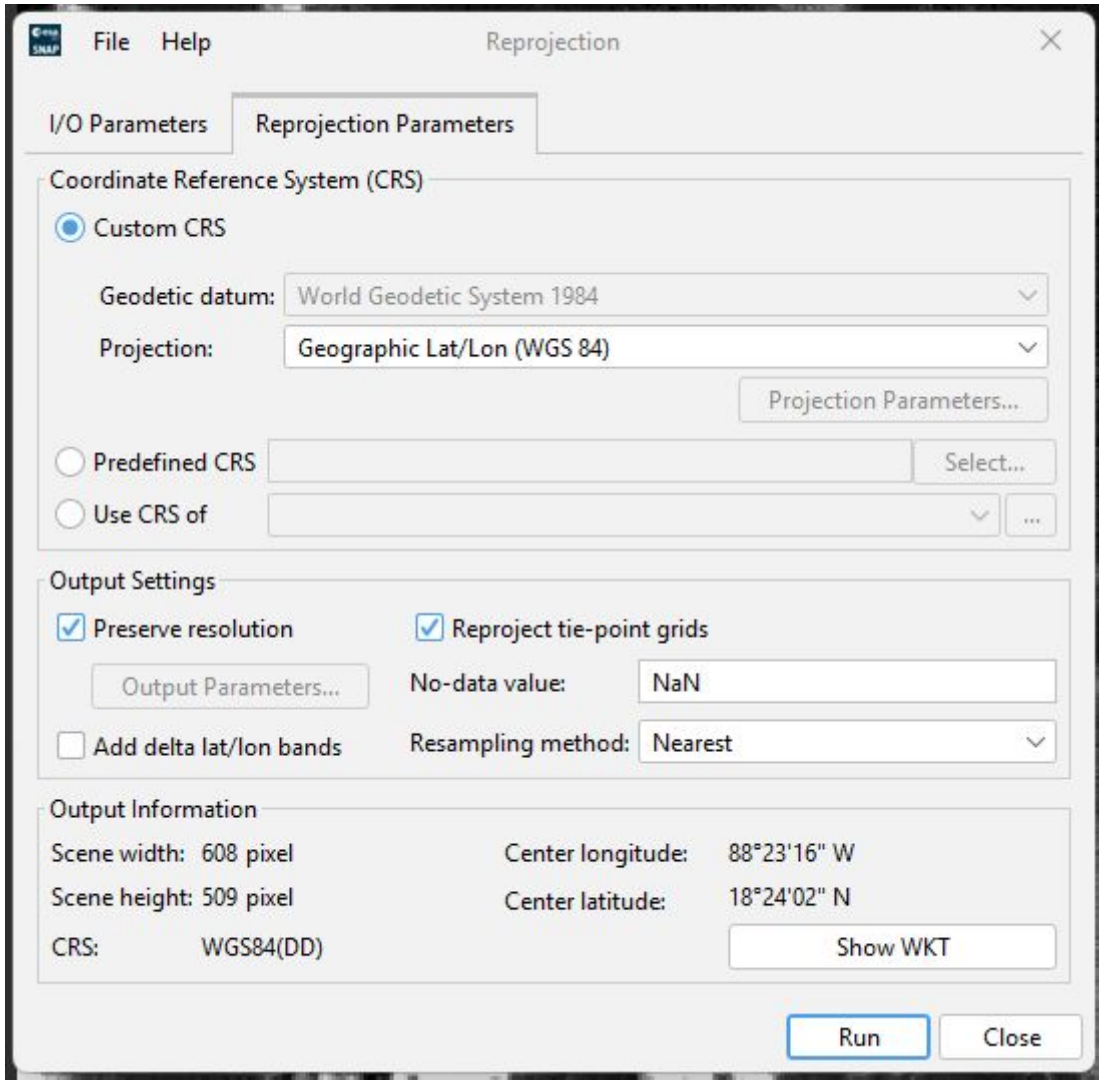
File
Help
Reprojection
I/O Parameters
Reprojection Parameters
Coordinate Reference System (CRS)
Custom CRS
Geodetic datum:
World Geodetic System 1984
Projection:
Geographic Lat/Lon (WGS 84)
Projection Parameters...
Predefined CRS
Select...
Use CRS of
...
Output Settings
Preserve resolution
Reproject tie-point grids
Output Parameters...
No-data value:
NaN
Add delta lat/lon bands
Resampling method:
Nearest
Output Information
Scene width: 608 pixel
Scene height: 509 pixel
CRS: WGS84(DD)
Center longitude: 88°23'16" W
Center latitude: 18°24'02" N
Show WKT
Run
Close

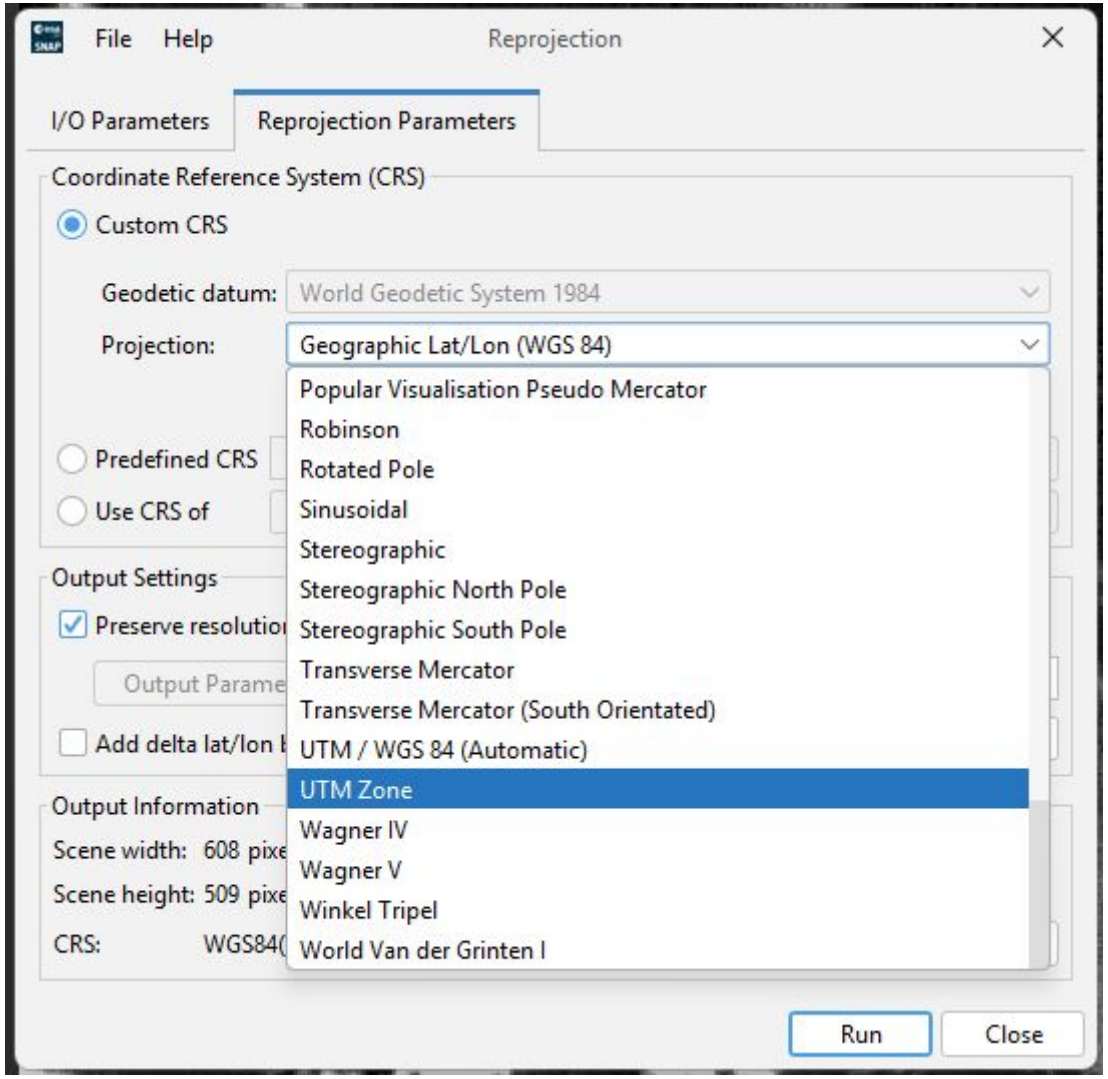
File
Help
Reprojection
I/O Parameters
Reprojection Parameters
Coordinate Reference System (CRS)
Custom CRS
Geodetic datum:
World Geodetic System 1984
Projection:
Geographic Lat/Lon (WGS 84)
Popular Visualisation Pseudo Mercator
Robinson
Rotated Pole
Sinusoidal
Stereographic
Stereographic North Pole
Stereographic South Pole
Transverse Mercator
Transverse Mercator (South Orientated)
UTM / WGS 84 (Automatic)
UTM Zone
Wagner IV
Wagner V
Winkel Tripel
World Van der Grinten I
Predefined CRS
Use CRS of
Output Settings
Preserve resolutio
Output Parame
Add delta lat/lon
Output Information
Scene width: 608 pixe
Scene height: 509 pixe
CRS: WGS84(
Run
Close

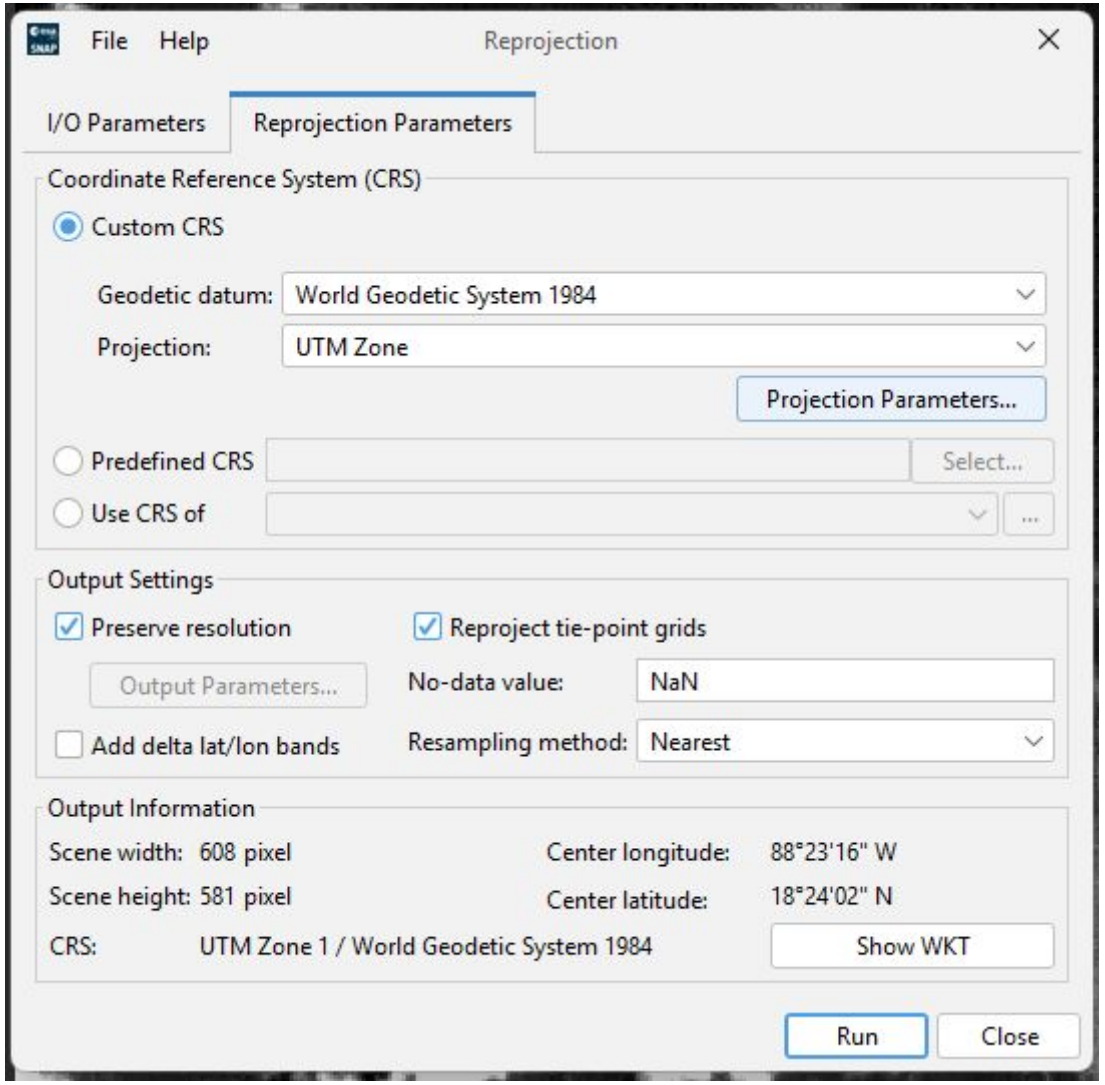
File
Help
Reprojection
I/O Parameters
Reprojection Parameters
Coordinate Reference System (CRS)
Custom CRS
Geodetic datum:
World Geodetic System 1984
Projection:
UTM Zone
Projection Parameters...
Predefined CRS
Select...
Use CRS of
...
Output Settings
Preserve resolution
Reproject tie-point grids
Output Parameters...
No-data value:
NaN
Add delta lat/lon bands
Resampling method:
Nearest
Output Information
Scene width: 608 pixel
Center longitude: 88°23'16" W
Scene height: 581 pixel
Center latitude: 18°24'02" N
CRS: UTM Zone 1 / World Geodetic System 1984
Show WKT
Run
Close

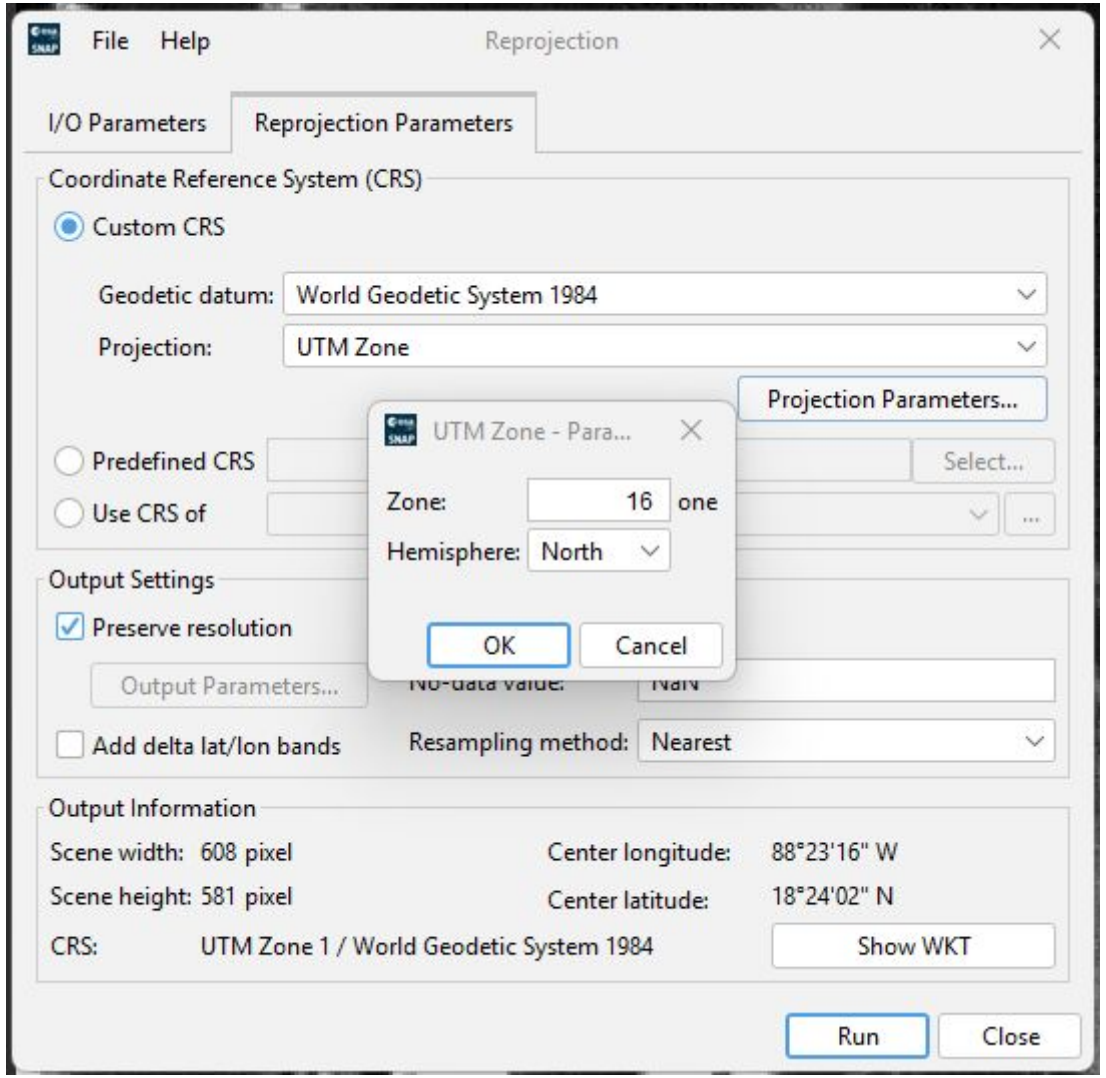
File
Help
Reprojection
I/O Parameters
Reprojection Parameters
Coordinate Reference System (CRS)
Custom CRS
Geodetic datum:
World Geodetic System 1984
Projection:
UTM Zone
Projection Parameters...
UTM Zone - Para...
Zone:
16
one
Hemisphere:
North
OK
Cancel
Predefined CRS
Select...
Use CRS of
Output Settings
Preserve resolution
Output Parameters...
Add delta lat/lon bands
Resampling method:
Nearest
Output Information
Scene width: 608 pixel
Scene height: 581 pixel
Center longitude: 88°23'16" W
Center latitude: 18°24'02" N
CRS: UTM Zone 1 / World Geodetic System 1984
Show WKT
Run
Close

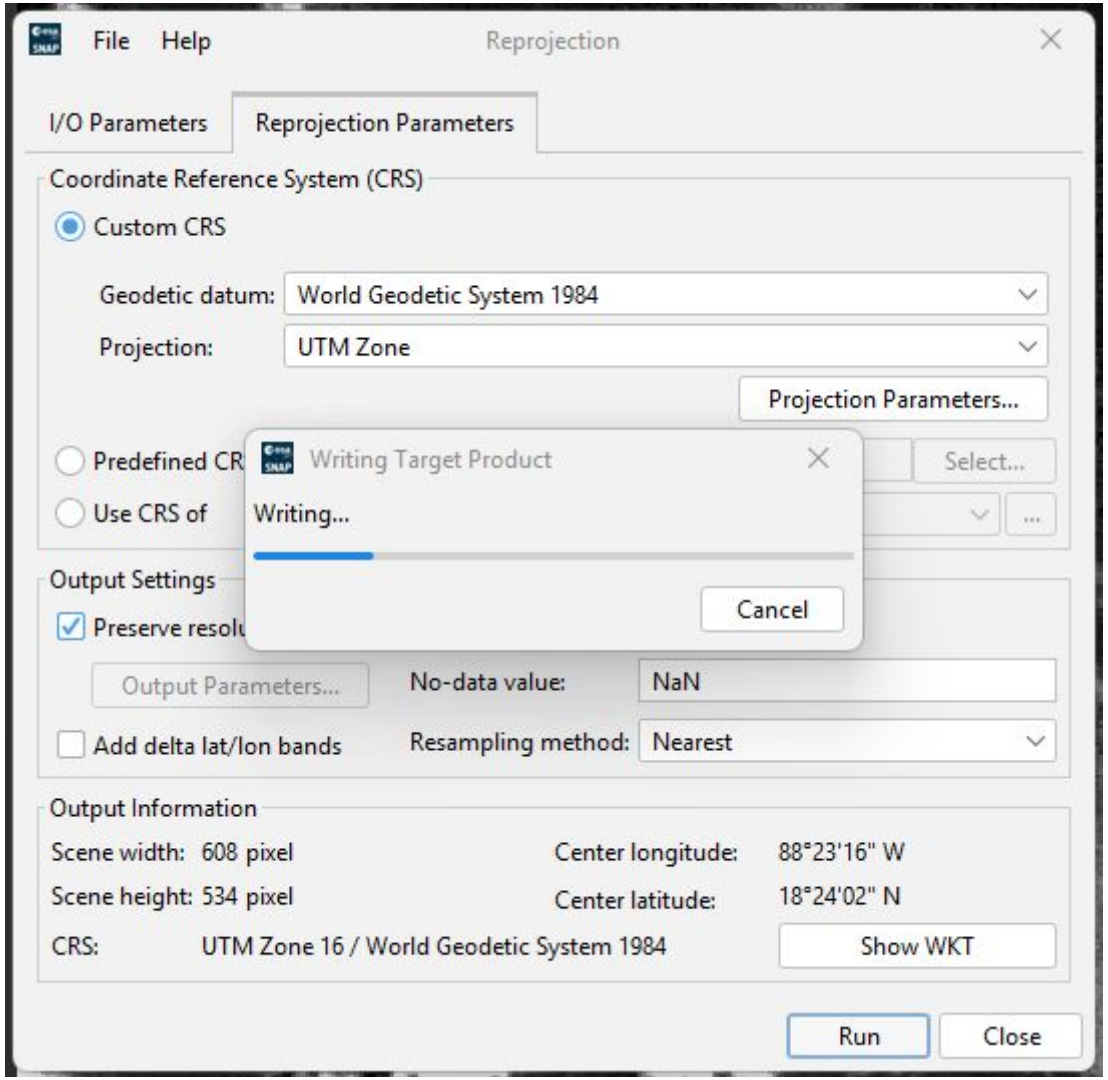
File
Help
Reprojection
I/O Parameters
Reprojection Parameters
Coordinate Reference System (CRS)
Custom CRS
Geodetic datum:
World Geodetic System 1984
Projection:
UTM Zone
Projection Parameters...
Predefined CR
Select...
Use CRS of
Writing Target Product
Writing...
Cancel
Output Settings
Preserve resolu
Output Parameters...
No-data value:
NaN
Add delta lat/lon bands
Resampling method:
Nearest
Output Information
Scene width: 608 pixel
Center longitude:
88°23'16" W
Scene height: 534 pixel
Center latitude:
18°24'02" N
CRS:
UTM Zone 16 / World Geodetic System 1984
Show WKT
Run
Close

File Edit View Analysis Layer Vector Raster Optical Radar Tools Window Help [2] surface_reflectance_Band1 - [20250824_171857_84_4001_basic_sr_hdf5_reprojected] - [D:\gis\compil_imagery\hyperspectral\planet_tanager\20250824_171857_84_4001_basic_sr_hdf5_reproj...

Search (Ctrl+I)

Product Explorer | Pixel Info

- [1] 20250824_171857_84_4001_basic_sr_hdf5
- [2] 20250824_171857_84_4001_basic_sr_hdf5_reprojected
  - Metadata
  - Vector Data
  - Bands
    - Longitude
    - Latitude
    - aerosol_optical_depth
    - beta_cirrus_mask
    - beta_cloud_mask
    - column_water_vapour
    - nodata_pixels
    - sensor_azimuth
    - sensor_to_ground_path_length
    - sensor_zenith
    - sun_azimuth
    - sun_zenith
    - surface_reflectance_Band1
    - surface_reflectance_Band2
    - surface_reflectance_Band3
    - surface_reflectance_Band4
    - surface_reflectance_Band5
    - surface_reflectance_Band6
    - surface_reflectance_Band7

Navigation - [2] sur... | Colour Manipulation - ... | Uncertainty Visualisation | World View

1 : 22.23 0°

[2] surface_reflectance_Band1

Product Library | Layer Manager | Mask Manager

X -- Y -- Lat -- Lon -- Zoom -- Level -- Pixel Spacing: -- m -- m

File Edit View Analysis Layer Vector Raster Optical Radar Tools Window Help

[3] 20250824_171857_84_4001_basic_sr_hdf5_reprojected_resampled_060m - [not saved] - SNAP 13

Search (Ctrl+I)

- Open Product...
- Reopen Product
- Product Library
- Close Product
- Close All Products
- Close Other Products
- Save Product
- Save Product As...
- Session
- Projects
- Import
- Export
  - Other
  - SAR Formats
  - JPEG-2000
  - CSV
  - GeoTIFF / BigTIFF
  - BEAM-DIMAP
  - ENVI
  - GeoTIFF
  - HDF5
  - NetCDF4-BEAM
  - NetCDF4-CF
  - ZNAP
- Exit

1_basic_sr_hdf5
1_basic_sr_hdf5_reprojected
1_basic_sr_hdf5_reprojected_resampled_060m

sensor_to_ground_p
sensor_zenith
sun_azimuth
sun_zenith
surface_reflectance_
surface_reflectance_
surface_reflectance_
surface_reflectance_
surface_reflectance_
surface_reflectance_

Navigation | Colour Manipul | lisation | World View

1 : 22.23 | 0°

Product Library | Layer Manager | Mask Manager

X -- Y -- | Lat -- Lon -- | Zoom -- Level -- | Pixel Spacing: -- m -- m

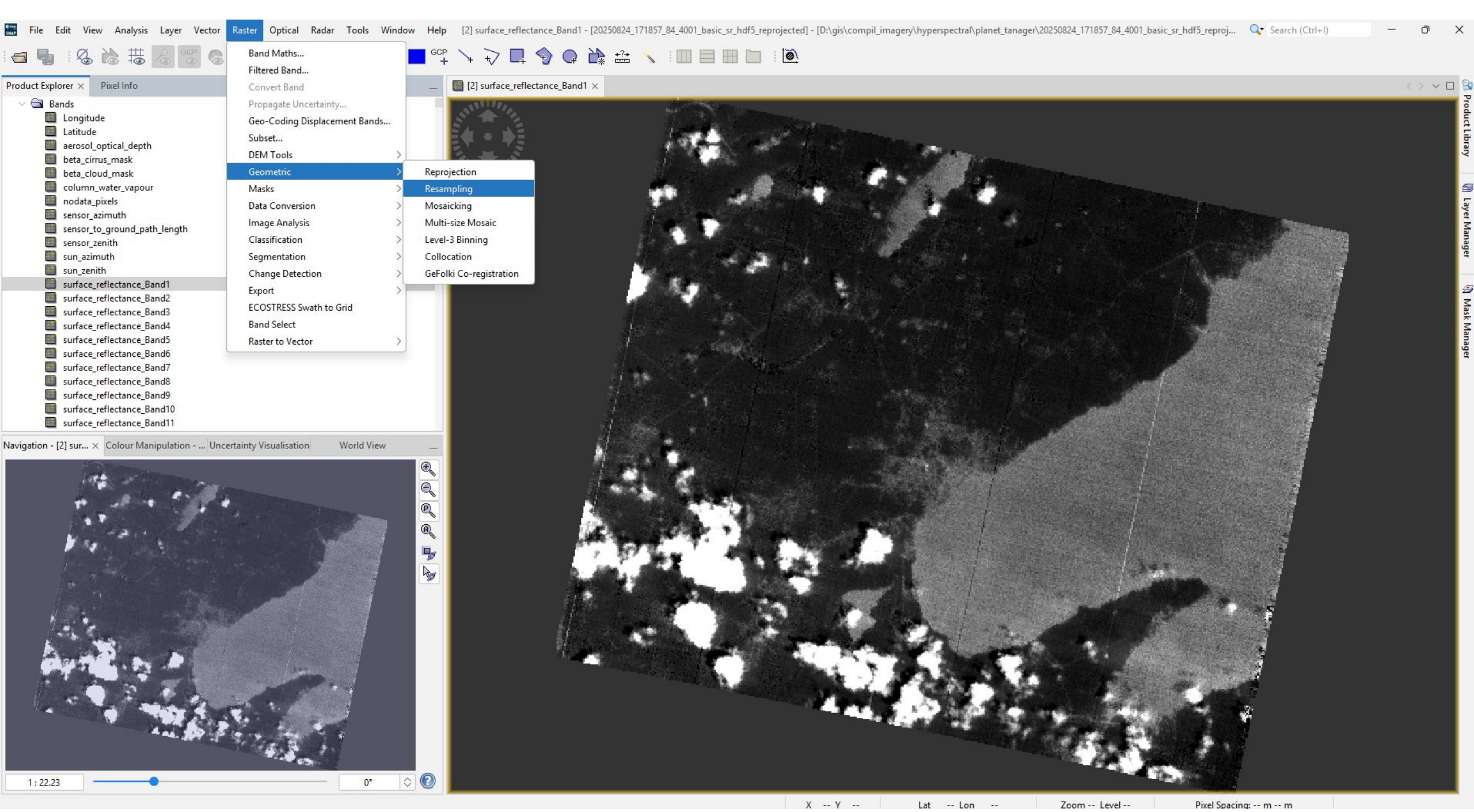
File Edit View Analysis Layer Vector Raster Optical Radar Tools Window Help
[2] surface_reflectance_Band1 - [20250824_171857_84_4001_basic_sr_hdf5_reprojected] - [D:\gis\compil_imagery\hyperspectral\planet_tanager\20250824_171857_84_4001_basic_sr_hdf5_reproj...
Search (Ctrl+I)
Band Maths...
Filtered Band...
Convert Band
Propagate Uncertainty...
Geo-Coding Displacement Bands...
Subset...
DEM Tools
Geometric
Masks
Data Conversion
Image Analysis
Classification
Segmentation
Change Detection
Export
ECOSTRESS Swath to Grid
Band Select
Raster to Vector
Reprojection
Resampling
Mosaicking
Multi-size Mosaic
Level-3 Binning
Collocation
GeFolki Co-registration
Product Explorer
Pixel Info
Bands
Longitude
Latitude
aerosol_optical_depth
beta_cirrus_mask
beta_cloud_mask
column_water_vapour
nodata_pixels
sensor_azimuth
sensor_to_ground_path_length
sensor_zenith
sun_azimuth
sun_zenith
surface_reflectance_Band1
surface_reflectance_Band2
surface_reflectance_Band3
surface_reflectance_Band4
surface_reflectance_Band5
surface_reflectance_Band6
surface_reflectance_Band7
surface_reflectance_Band8
surface_reflectance_Band9
surface_reflectance_Band10
surface_reflectance_Band11
Navigation - [2] sur...
Colour Manipulation - ...
Uncertainty Visualisation
World View
1 : 22.23
0°
[2] surface_reflectance_Band1
Product Library
Layer Manager
Mask Manager
X -- Y --
Lat -- Lon --
Zoom -- Level --
Pixel Spacing: -- m -- m

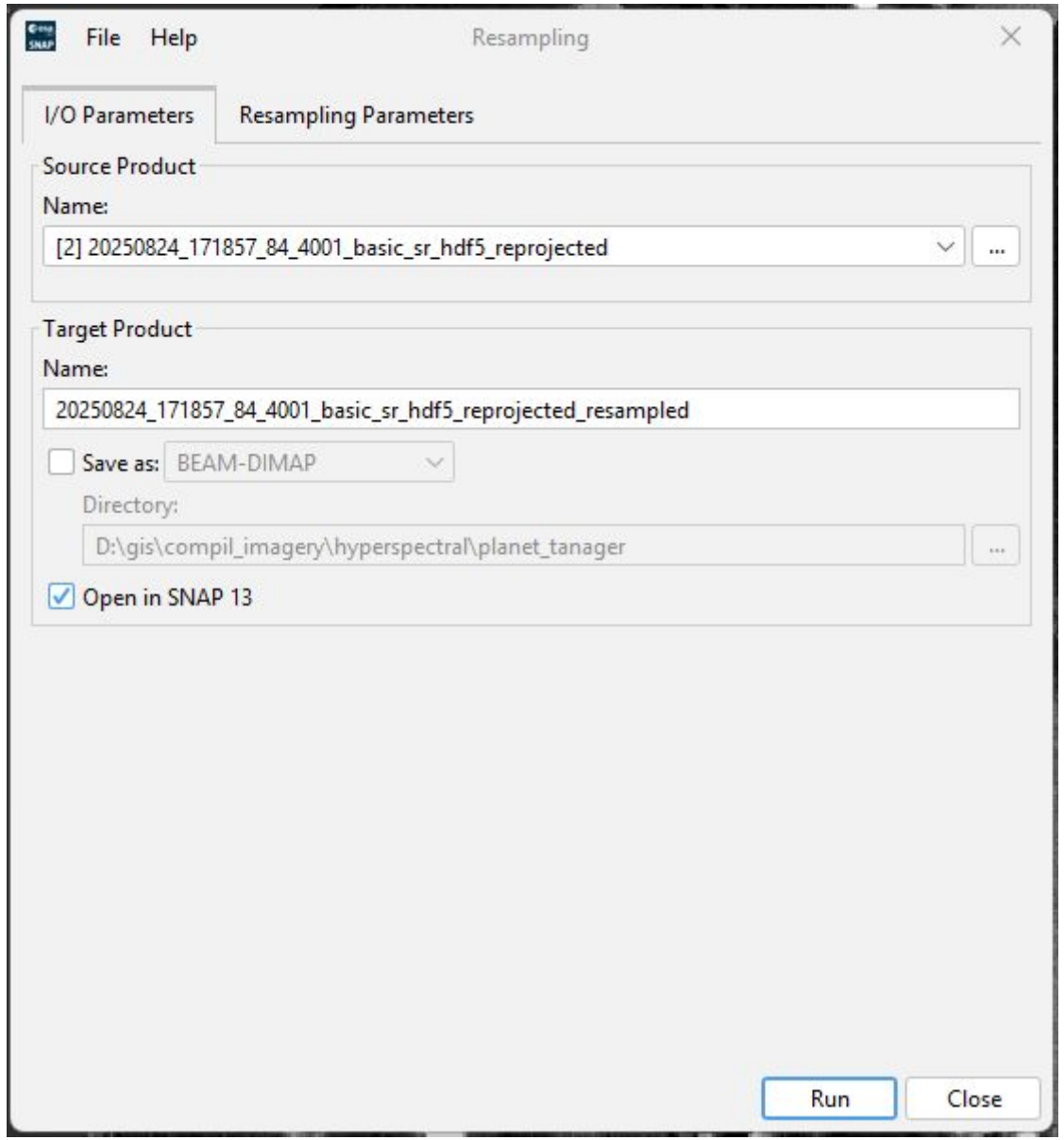
File
Help
Resampling
I/O Parameters
Resampling Parameters
Source Product
Name:
[2] 20250824_171857_84_4001_basic_sr_hdf5_reprojected
...
Target Product
Name:
20250824_171857_84_4001_basic_sr_hdf5_reprojected_resampled
Save as:
BEAM-DIMAP
Directory:
D:\gis\compil_imagery\hyperspectral\planet_tanager
...
Open in SNAP 13
Run
Close

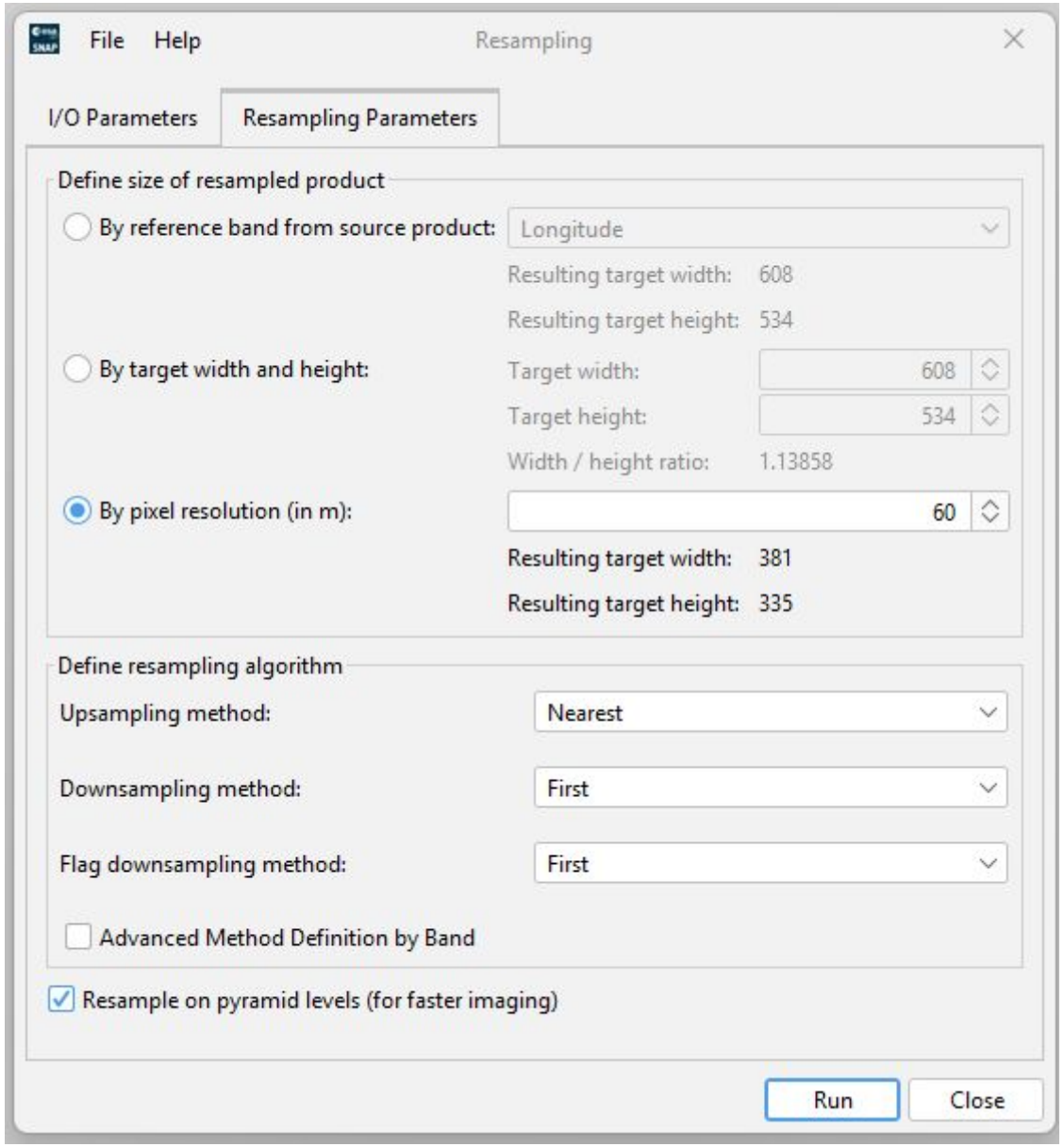
File
Help
Resampling
I/O Parameters
Resampling Parameters
Define size of resampled product
By reference band from source product:
Longitude
Resulting target width: 608
Resulting target height: 534
By target width and height:
Target width: 608
Target height: 534
Width / height ratio: 1.13858
By pixel resolution (in m):
60
Resulting target width: 381
Resulting target height: 335
Define resampling algorithm
Upsampling method:
Nearest
Downsampling method:
First
Flag downsampling method:
First
Advanced Method Definition by Band
Resample on pyramid levels (for faster imaging)
Run
Close

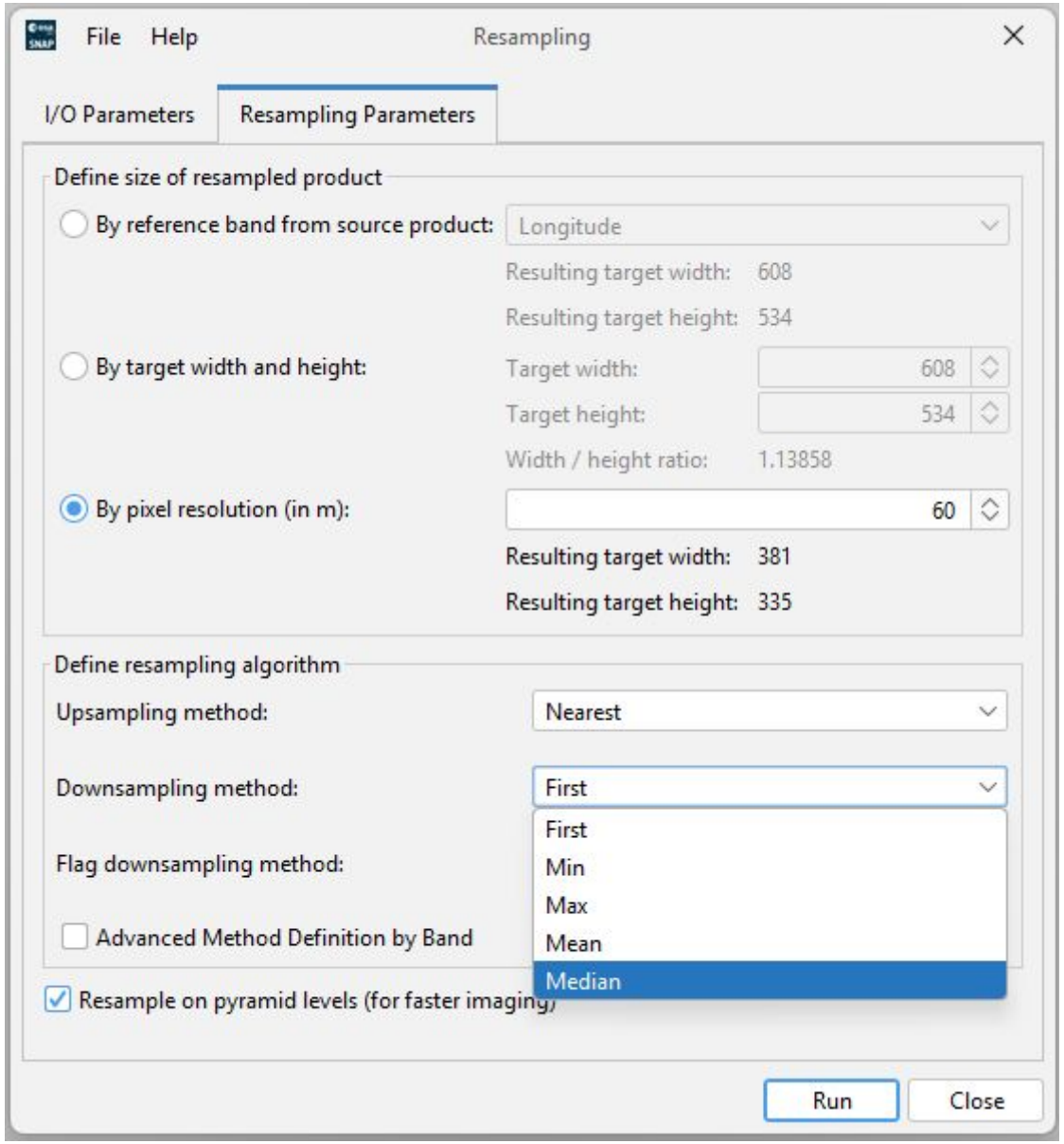
File
Help
Resampling
I/O Parameters
Resampling Parameters
Define size of resampled product
By reference band from source product:
Longitude
Resulting target width: 608
Resulting target height: 534
By target width and height:
Target width: 608
Target height: 534
Width / height ratio: 1.13858
By pixel resolution (in m):
60
Resulting target width: 381
Resulting target height: 335
Define resampling algorithm
Upsampling method:
Nearest
Downsampling method:
First
First
Min
Max
Mean
Median
Flag downsampling method:
Advanced Method Definition by Band
Resample on pyramid levels (for faster imaging)
Run
Close

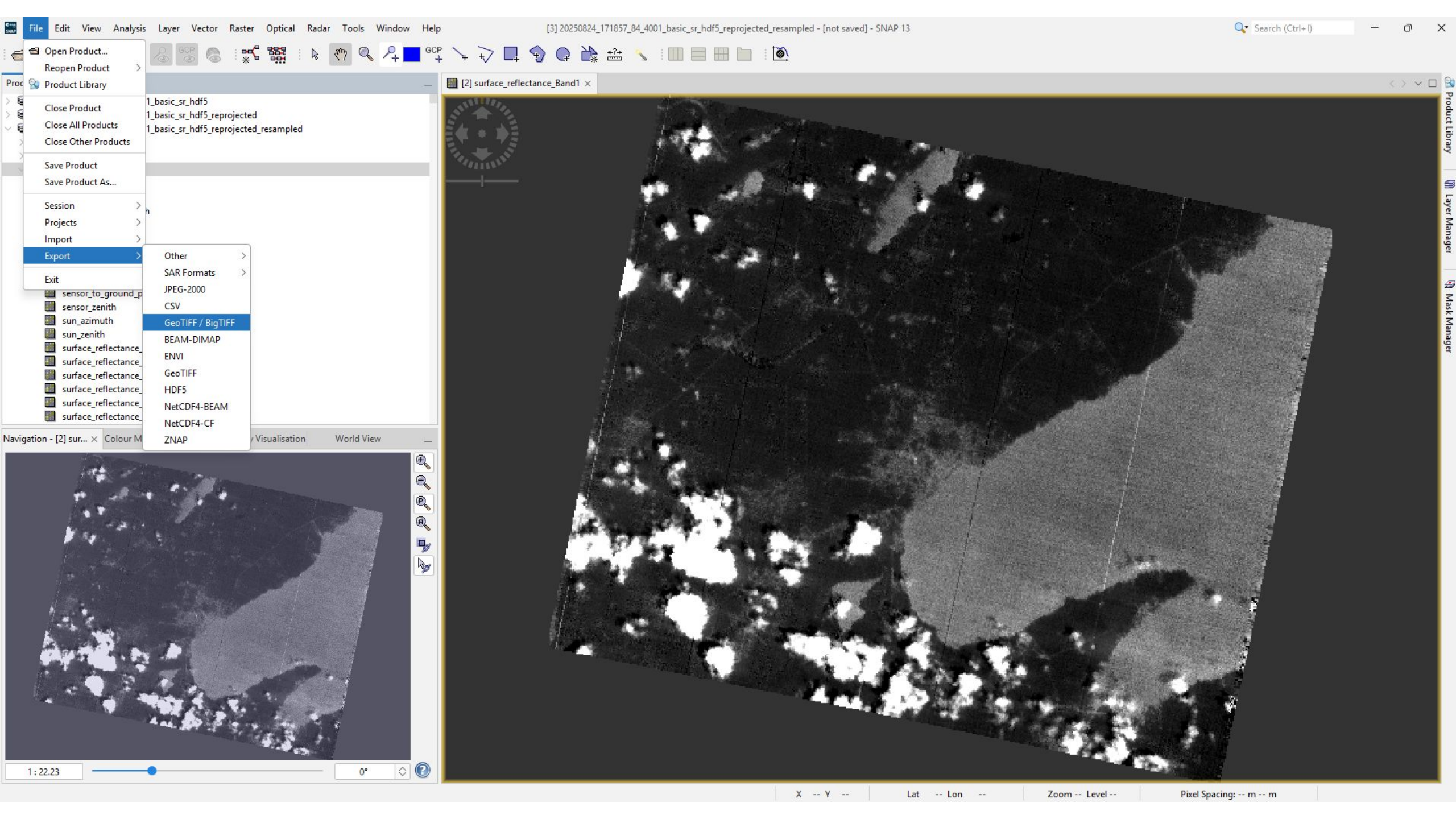
File
Edit
View
Analysis
Layer
Vector
Raster
Optical
Radar
Tools
Window
Help
[3] 20250824_171857_84_4001_basic_sr_hdf5_reprojected_resampled - [not saved] - SNAP 13
Search (Ctrl+I)
Open Product...
Reopen Product
Product Library
Close Product
Close All Products
Close Other Products
Save Product
Save Product As...
Session
Projects
Import
Export
Exit
Other
SAR Formats
JPEG-2000
CSV
GeoTIFF / BigTIFF
BEAM-DIMAP
ENVI
GeoTIFF
HDF5
NetCDF4-BEAM
NetCDF4-CF
ZNAP
1_basic_sr_hdf5
1_basic_sr_hdf5_reprojected
1_basic_sr_hdf5_reprojected_resampled
sensor_to_ground_p
sensor_zenith
sun_azimuth
sun_zenith
surface_reflectance_
surface_reflectance_
surface_reflectance_
surface_reflectance_
surface_reflectance_
surface_reflectance_
Navigation - [2] sur...
Colour M
Visualisation
World View
1 : 22.23
0°
[2] surface_reflectance_Band1
Product Library
Layer Manager
Mask Manager
X -- Y --
Lat -- Lon --
Zoom -- Level --
Pixel Spacing: -- m -- m

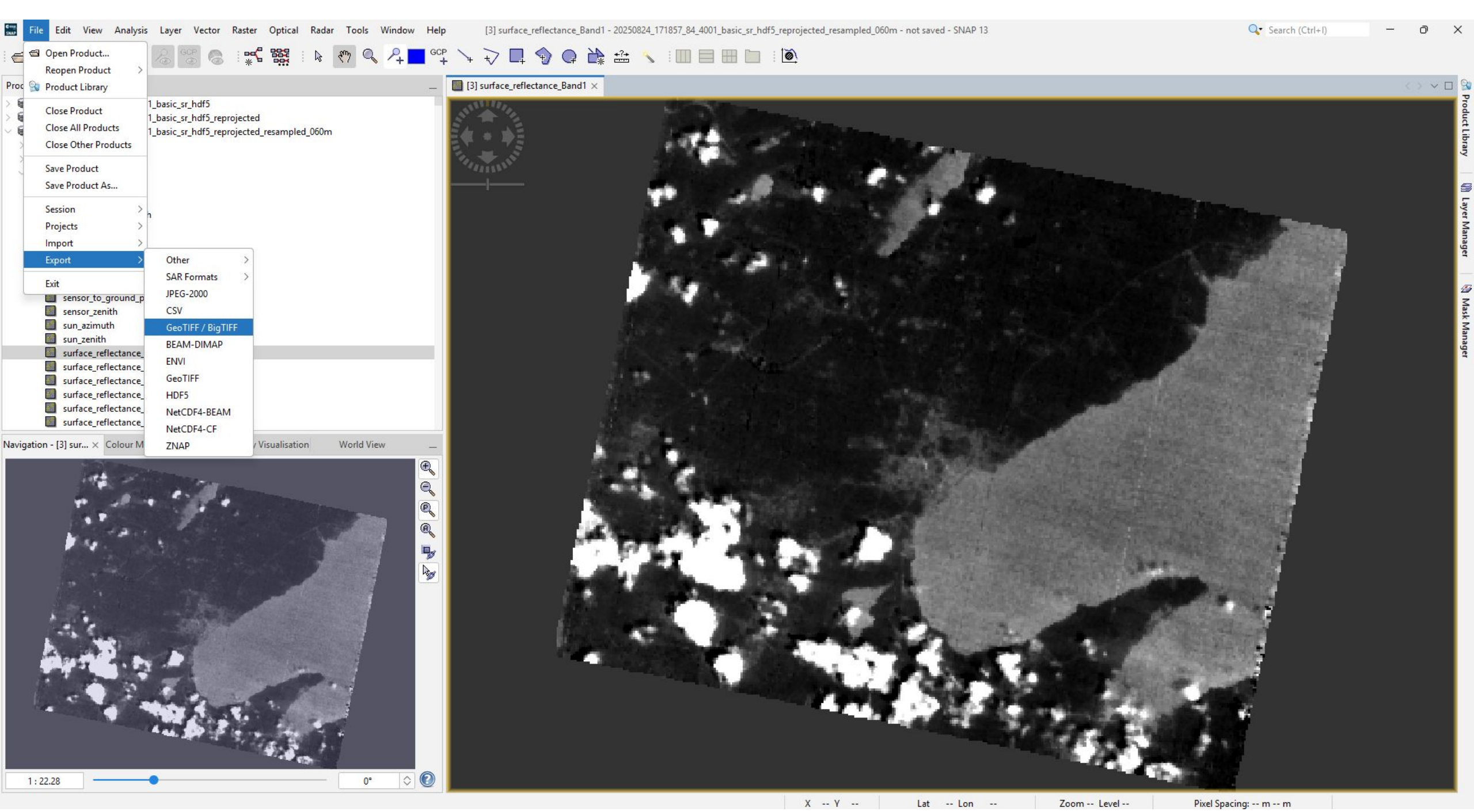
File
Edit
View
Analysis
Layer
Vector
Raster
Optical
Radar
Tools
Window
Help
[3] surface_reflectance_Band1 - 20250824_171857_84_4001_basic_sr_hdf5_reprojected_resampled_060m - not saved - SNAP 13
Search (Ctrl+I)
Open Product...
Reopen Product
Product Library
Close Product
Close All Products
Close Other Products
Save Product
Save Product As...
Session
Projects
Import
Export
Exit
Other
SAR Formats
JPEG-2000
CSV
GeoTIFF / BigTIFF
BEAM-DIMAP
ENVI
GeoTIFF
HDF5
NetCDF4-BEAM
NetCDF4-CF
ZNAP
1_basic_sr_hdf5
1_basic_sr_hdf5_reprojected
1_basic_sr_hdf5_reprojected_resampled_060m
sensor_to_ground_p
sensor_zenith
sun_azimuth
sun_zenith
surface_reflectance_
surface_reflectance_
surface_reflectance_
surface_reflectance_
surface_reflectance_
surface_reflectance_
Navigation - [3] sur...
Colour M
Visualisation
World View
1 : 22.28
0°
[3] surface_reflectance_Band1
Product Library
Layer Manager
Mask Manager
X -- Y --
Lat -- Lon --
Zoom -- Level --
Pixel Spacing: -- m -- m

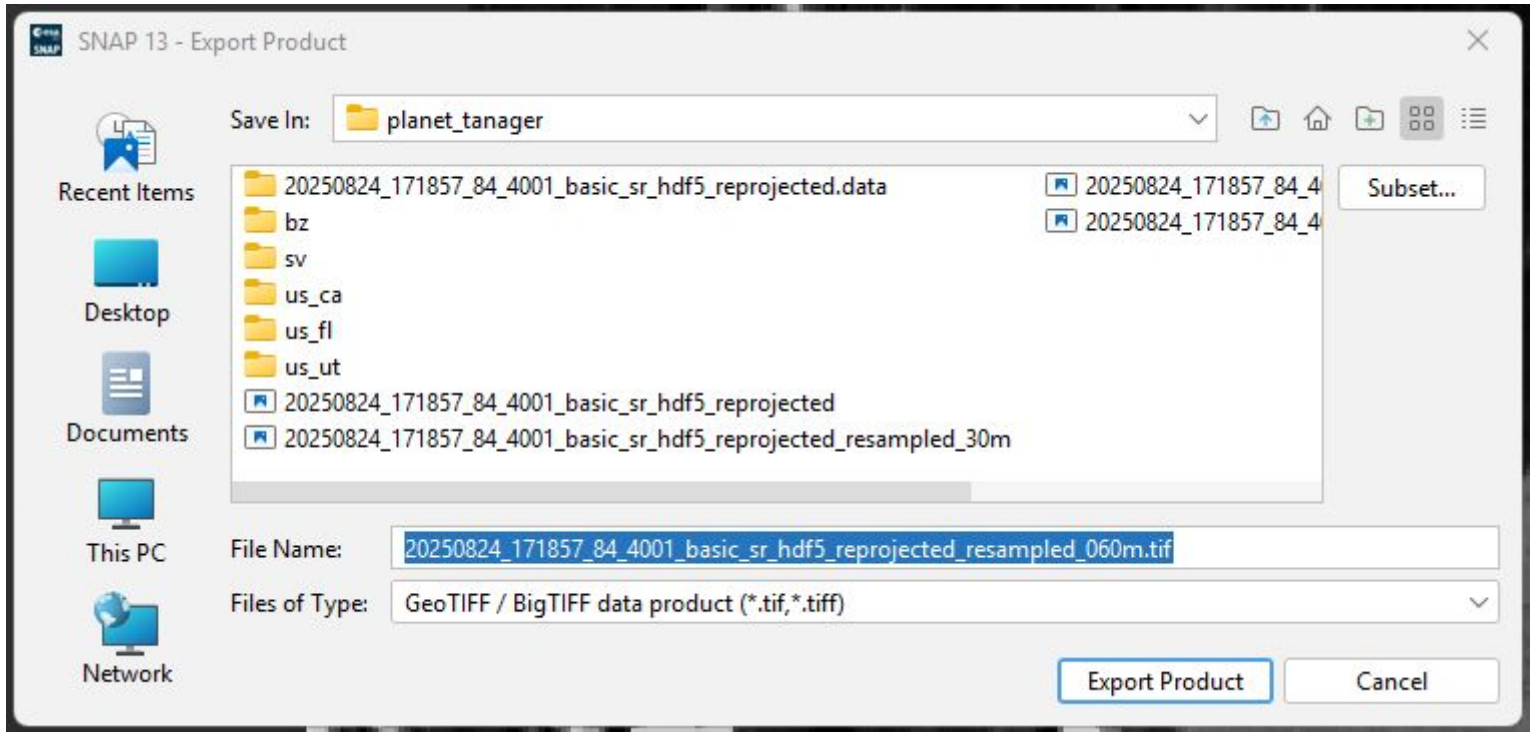
SNAP 13 - Export Product
Save In:
planet_tanager
Recent Items
Desktop
Documents
This PC
Network
20250824_171857_84_4001_basic_sr_hdf5_reprojected.data
bz
sv
us_ca
us_fl
us_ut
20250824_171857_84_4001_basic_sr_hdf5_reprojected
20250824_171857_84_4001_basic_sr_hdf5_reprojected_resampled_30m
20250824_171857_84_4
20250824_171857_84_4
Subset...
File Name:
20250824_171857_84_4001_basic_sr_hdf5_reprojected_resampled_060m.tif
Files of Type:
GeoTIFF / BigTIFF data product (*.tif,*.tiff)
Export Product
Cancel

ArcGIS® Pro
Initializing
esri
THE SCIENCE OF WHERE
© 2025 Esri. All Rights Reserved.

dl_default2

Command Search (Alt+Q)

Emil - University of Alabama in Huntsville

Project | Catalog | Insert | Analysis | View | Imagery | Share | Help | Manage

Paste | Cut | Copy | Copy Path — Clipboard

Open | Remove | Rename | Refresh | Delete | Repair | Sort | Add To Project | Add To Favorites | Add To New Projects — Organize

New | Add | Import — Create

Data Sources — Update

Edit | Import | Upgrade | Save As | Export | Synchronize — Metadata

Contents

- Project
- Portal
- Computer
- Favorites
  - gis
    - compil_biodiversity
    - compil_boundaries
    - compil_geophysical
    - compil_imagery
      - _roi
      - aerial_photos
      - embeddings
      - hyperspectral
        - nasa_emit
        - nasa_pace
        - planet_tanager
          - bz
          - sv
          - us_ca
          - us_fl
          - us_ut
          - x_scrap
          - 20250824_171857_84_4001_basic_sr_hdf5_reprojected_resampled_60m.tif
      - lidar
      - multispectral
      - sar
      - thermal
    - compil_topo
    - compil_veg
    - MISC
    - servir_cms
    - workspace
    - workspace_dl
    - ZIPS

Catalog

Favorites > gis > compil_imagery > hyperspectral > planet_tanager

Search planet_tanager

Name	Type	Date Modified	Size
bz	Folder	4/15/2026 2:32:31 PM	
sv	Folder	4/14/2026 3:05:21 PM	
us_ca	Folder	4/16/2026 1:15:08 PM	
us_fl	Folder	4/16/2026 1:15:18 PM	
us_ut	Folder	4/16/2026 1:15:14 PM	
x_scrap	Folder	4/30/2026 3:42:59 PM	
20250824_171857_84_4001_basic_sr_hdf5_reprojected_resampled_60m.tif	Raster Dataset	4/20/2026 1:53:11 PM	375,692 KB

7 Items 0 Items Selected

Geoprocessing | Symbology | History

dl_default2

Command Search (Alt+Q)

Emil - University of Alabama in Huntsville

Project | Catalog | Insert | Analysis | View | Imagery | Share | Help | Manage

Paste | Cut | Copy | Copy Path — Clipboard

Open | Remove | Delete | Add To Project | Rename | Repair | Add To Favorites | Refresh | Sort | Add To New Projects — Organize

Make Default | Add Folder Connection — Project

Folder | File Geodatabase | Mobile Geodatabase | GeoPackage | Database Connection | Toolbox (.atbx) | Python Toolbox | Suitability Models | Notebook | LAS Dataset | Shapefile | Locator — Create

Contents

- Project
- Portal
- Computer
- Favorites
  - gis
    - compil_biodiversity
    - compil_boundaries
    - compil_geophysical
    - compil_imagery
      - _roi
      - aerial_photos
      - embeddings
      - hyperspectral
        - nasa_emit
        - nasa_pace
        - planet_tanager
          - bz
          - sv
          - us_ca
          - us_fl
          - us_ut
          - x_scrap
          - 20250824_171857_84_4001_basic_sr_hdf5_reprojected_resampled_60m.tif
      - lidar
      - multispectral
      - sar
      - thermal
    - compil_topo
    - compil_veg
    - MISC
    - servir_cms
    - workspace
    - workspace_dl
    - ZIPS

Catalog

202508

Name

Band_1, Band_2, Band_3, Band_4, Band_5, Band_6, Band_7, Band_8, Band_9, Band_10, Band_11, Band_12, Band_13, Band_14, Band_15, Band_16, Band_17, Band_18, Band_19, Band_20, Band_21, Band_22, Band_23, Band_24, Band_25, Band_26, Band_27, Band_28, Band_29, Band_30

866 Items 0 Items Selected

Raster Dataset Properties : 20250824_171857_84_4001_basic_sr_hdf5_reprojected_resampled_60m.tif

Search

General

Find data source properties

Data Source

Property	Value
Name	20250824_171857_84_4001_basic_sr_hdf5_reprojected_resampled_6...
Data Type	File System Raster
Folder	D:\gis\compil_imagery\hyperspectral\planet_tanager\
Minimum Client Version	1.0 / 10.0

Raster Information

Property	Value
Columns	382
Rows	336
Number of Bands	866
Cell Size X	60.000000
Cell Size Y	60.000000
Uncompressed Size	848.03 MB
Format	TIFF
Source Type	Generic
Pixel Type	double precision
Pixel Depth	64 Bit
NoData Value	
Colormap	absent
Pyramids	absent
Compression	LZW
Mensuration Capabilities	Basic
Geodata Transform	Defined

Band Metadata

Extent

Spatial Reference

OK | Cancel

Geoprocessing | Symbology | History

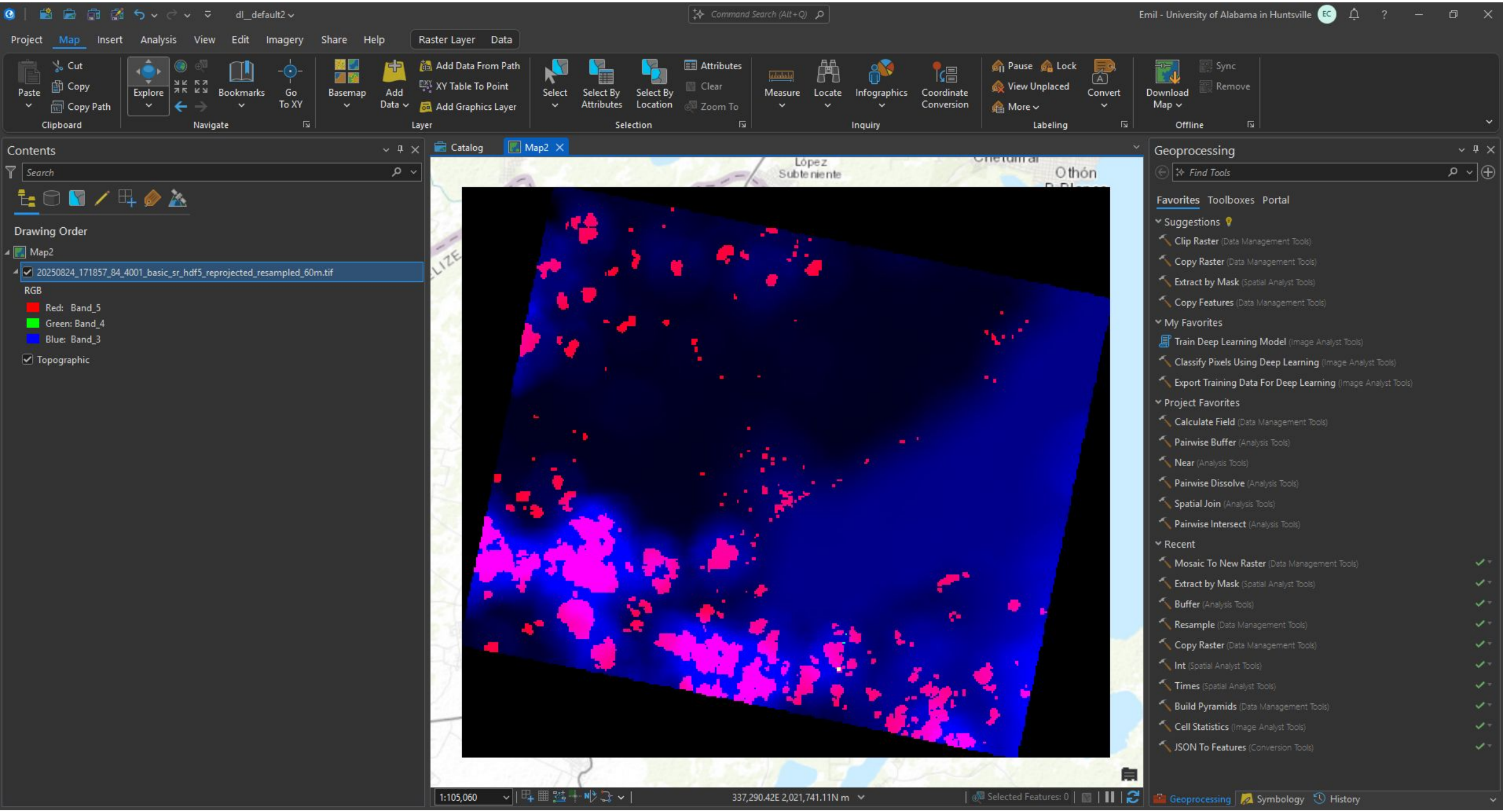
dl_default2
Command Search (Alt+Q)
Emil - University of Alabama in Huntsville
Project
Map
Insert
Analysis
View
Edit
Imagery
Share
Help
Raster Layer
Data
Paste
Cut
Copy
Copy Path
Clipboard
Explore
Bookmarks
Go To XY
Navigate
Basemap
Add Data
Add Data From Path
XY Table To Point
Add Graphics Layer
Layer
Select
Select By Attributes
Select By Location
Attributes
Clear
Zoom To
Selection
Measure
Locate
Infographics
Coordinate Conversion
Inquiry
Pause
Lock
View Unplaced
More
Convert
Labeling
Download Map
Sync
Remove
Offline
Contents
Search
Drawing Order
Map2
20250824_171857_84_4001_basic_sr_hdf5_reprojected_resampled_60m.tif
RGB
Red: Band_5
Green: Band_4
Blue: Band_3
Topographic
Catalog
Map2
López Subteniente
Othón
1:105,060
337,290.42E 2,021,741.11N m
Selected Features: 0
Geoprocessing
Find Tools
Favorites
Toolboxes
Portal
Suggestions
Clip Raster (Data Management Tools)
Copy Raster (Data Management Tools)
Extract by Mask (Spatial Analyst Tools)
Copy Features (Data Management Tools)
My Favorites
Train Deep Learning Model (Image Analyst Tools)
Classify Pixels Using Deep Learning (Image Analyst Tools)
Export Training Data For Deep Learning (Image Analyst Tools)
Project Favorites
Calculate Field (Data Management Tools)
Pairwise Buffer (Analysis Tools)
Near (Analysis Tools)
Pairwise Dissolve (Analysis Tools)
Spatial Join (Analysis Tools)
Pairwise Intersect (Analysis Tools)
Recent
Mosaic To New Raster (Data Management Tools)
Extract by Mask (Spatial Analyst Tools)
Buffer (Analysis Tools)
Resample (Data Management Tools)
Copy Raster (Data Management Tools)
Int (Spatial Analyst Tools)
Times (Spatial Analyst Tools)
Build Pyramids (Data Management Tools)
Cell Statistics (Image Analyst Tools)
JSON To Features (Conversion Tools)
Geoprocessing
Symbology
History

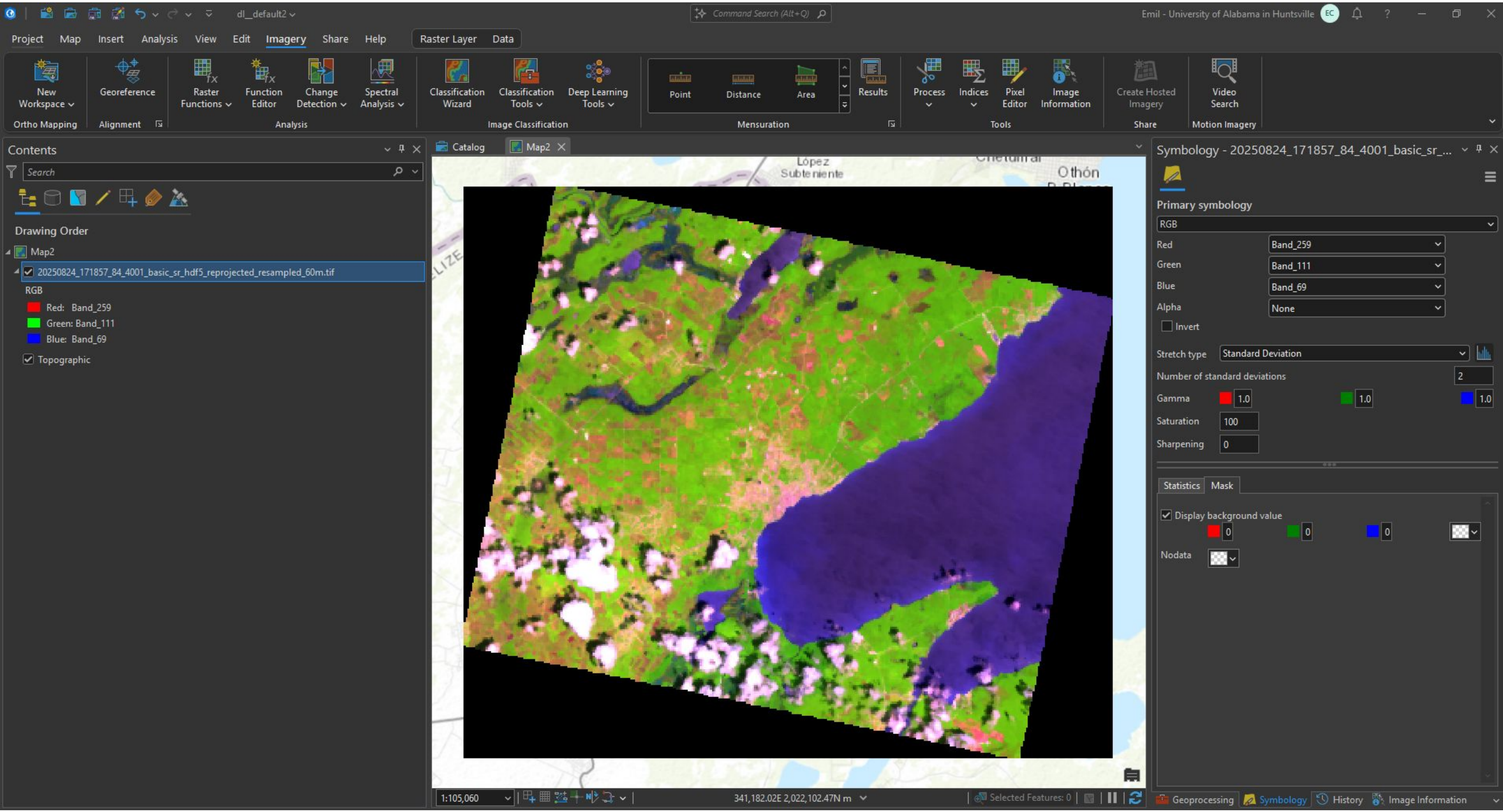
dl_default2
Command Search (Alt+Q)
Emil - University of Alabama in Huntsville
Project
Map
Insert
Analysis
View
Edit
Imagery
Share
Help
Raster Layer
Data
New Workspace
Georeference
Raster Functions
Function Editor
Change Detection
Spectral Analysis
Classification Wizard
Classification Tools
Deep Learning Tools
Point
Distance
Area
Results
Process
Indices
Pixel Editor
Image Information
Create Hosted Imagery
Video Search
Ortho Mapping
Alignment
Analysis
Image Classification
Mensuration
Tools
Share
Motion Imagery
Contents
Search
Drawing Order
Map2
20250824_171857_84_4001_basic_sr_hdf5_reprojected_resampled_60m.tif
RGB
Red: Band_259
Green: Band_111
Blue: Band_69
Topographic
Catalog
Map2
López Subteniente
Othón
1:105,060
341,182.02E 2,022,102.47N m
Selected Features: 0
Symbology - 20250824_171857_84_4001_basic_sr_...
Primary symbology
RGB
Red
Band_259
Green
Band_111
Blue
Band_69
Alpha
None
Invert
Stretch type
Standard Deviation
Number of standard deviations
2
Gamma
1.0
1.0
1.0
Saturation
100
Sharpening
0
Statistics
Mask
Display background value
0
0
0
Nodata
Geoprocessing
Symbology
History
Image Information

Questions?

emil.cherrington@uah.edu